Reviewer: Matthew P. Koenig
Date: 2/27/2026

CONTRACT No. B-13517

INDEX

PROJECT	STRUCTURE	TYPE	SPAN	OVER	STATION
F-068-6 (1)	44-70-6634	CONT. COMPOSITE PRESTR. CONC. I-BEAM	3 SPANS 49'-3, 50'-0, 49'-3 SKEW 15° RT	MUD CREEK	617+95 "A"

SHEET NO.	SHEET DESIGNATION	SUBJECT	F.H.W.A. APPROVAL
1	ONE SHEET	INDEX AND TITLE	
2	ONE SHEET	TYPICAL CROSS SECTIONS	
3	ONE SHEET	PLAN & PROFILE LINE "A"	
4	ONE SHEET	PLAN & PROFILE LINE "S1A" & "S2A"	
5	ONE SHEET	DETAILS	
6	ONE SHEET	SOIL BORINGS	
7	C1	LAYOUT	
8	C2	GENERAL PLAN	
9	C3	BENT N°1 & BENT N°4 DETAILS	
10	C4	BENT N°1 & BENT N°4 DETAILS & BILL OF MATERIALS	
11	C5	PIERS N°2 & 3 DETAILS & BILL OF MATERIALS	
12	C6	SUPERSTRUCTURE DETAILS	
13	C7	SUPERSTRUCTURE DETAILS & BILL OF MATERIALS	
14	ONE SHEET	MISCELLANEOUS TABLES	
15	ONE SHEET	BRIDGE SUMMARY	
16	ONE SHEET	BRIDGE ESTIMATE OF QUANTITIES	
17-35	NINETEEN SHEETS	CROSS SECTIONS	

TRAFFIC DATA		S.R. 44
A.D.T. (1978)		3320 V.P.D.
A.D.T. (1998 PROJECTED)		5290 V.P.D.
D.H.V. (1998 PROJECTED)		530 V.P.H.
TRUCKS		D.H.V. 6 % A.D.T. 10 %
DESIGN SPEED		60 M.P.H.
ACCESS CONTROL		NONE

PREPARED & RECOMMENDED BY
REID, QUEBE, ALLISON, WILCOX & ASSOCIATES INC.
INDIANAPOLIS, INDIANA
Norman Blattel 5/16/80

NORMAN B. PAVEL REGISTERED No. 13050 STATE OF INDIANA PROFESSIONAL ENGINEER

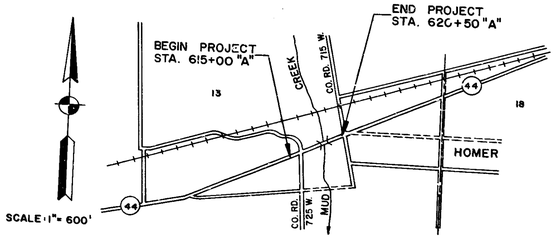
STATE OF INDIANA
INDIANA STATE HIGHWAY COMMISSION

BRIDGE PLANS
FOR SPANS OVER 20 FEET
ON
STATE ROAD NO. 44
PROJECT NO. F-068-6

(1) P.E.
(1) R/W
(1) CONST.

BEGINNING AT A POINT ON THE CENTERLINE OF S.R. 44 APPROXIMATELY 1053 FEET WESTERLY FROM THE INTERSECTION OF S.R. 44 AND COUNTY ROAD 725 W. THENCE EXTENDING EASTERLY 5300 FEET TO A POINT ON THE CENTERLINE OF S.R. 44 APPROXIMATELY 18.4 FEET WESTERLY FROM THE INTERSECTION OF S.R. 44 AND COUNTY ROAD 715 W ALL IN SECTION 13, T-13-N, R-8-E, WALKER TOWNSHIP, RUSH COUNTY

BRIDGE LENGTH: 0.029 MI.
ROADWAY LENGTH: 0.075 MI.
TOTAL LENGTH: 0.104 MI.
MAX. GRADE : 1.35 %



SCALE-1"= 600'

T-13-N, R-8-E
WALKER TOWNSHIP
RUSH COUNTY

NOTE:—
WHEREVER "INDIANA STATE HIGHWAY COMMISSION" APPEARS IN THESE PLANS, IT SHALL BE INTERPRETED AS "INDIANA DEPARTMENT OF HIGHWAYS" EXCEPT THE 1978 INDIANA STATE HIGHWAY COMMISSION SPECIFICATIONS SHALL BE USED.

INDIANA STATE HIGHWAY COMMISSION STANDARD SPECIFICATIONS DATED 1978 TO BE USED WITH THESE PLANS.

REVISIONS	
DATE	SHEET NO.
05-06-81	3, 4, 7
8-18-81	3, 4, 5, 7, 14, 16 & 23
01-26-82	2, 8, 12, 15 & 16, Deleted Sh. 43
02-22-82	2, 5, 8, 16

REVISIONS	
DATE	SHEET NO.

BRIDGES OVER 20' SPAN

FEDERAL REGION NO.	STATE	PROJECT NO.	FY BEGIN YEAR	SHEET NO.	TOTAL SHEETS
5	IND.	F-068-6(1)	1979	1	75

INDEX CONTINUED
STANDARD DRAWINGS

SHEET NO.	SHEET DESIGNATION	SUBJECT	F.H.W.A. APPROVAL	ADOPTED F.H.W.A. REVISION DATE
36	BRIDGE STD. BR1	ALUMINUM BRIDGE RAILING	12-16-80	R-11-3-80
37	BRIDGE STD. BR2	ALUMINUM BRIDGE RAILING DETAILS	12-16-80	R-11-3-80
38	BRIDGE STD. BR3	STEEL BRIDGE RAILING	5-10-79	R-12-1-78
39	BRIDGE STD. BR4	STEEL BRIDGE RAILING DETAILS	12-16-80	R-11-3-80
	BRIDGE STD. BR5	RAILING CONNECTION DETAILS	5-10-79	R-12-1-78
	BRIDGE STD. BR6	RAILING CONNECTION DETAILS		
40	BRIDGE STD. C1	MISCELLANEOUS DETAILS		
	BRIDGE STD. C2	MISCELLANEOUS DETAILS	12-21-81	R-12-7-81
41	BRIDGE STD. C3	MISCELLANEOUS DETAILS		
42	BRIDGE STD. C4	MISCELLANEOUS DETAILS	12-21-81	R-12-7-81
	BRIDGE STD. D	CASTING DETAILS ROADWAY DRAINS	12-4-74	R-10-29-74
	BRIDGE STD. M2	TEMPORARY RUNAROUND (Obsolete)		Deleted
	3RIDGE STD.			
44	BRIDGE STD. PB1	PRESTRESSED CONCRETE TYPE I I-BEAMS		
	BRIDGE STD. PB	PRESTRESSED CONCRETE TYPE I-BEAMS	4-16-62	A-1-16-62
	BRIDGE STD. PB6	PRESTRESSED BOX BEAMS		
	BRIDGE STD. PB	PRESTRESSED COMPOSITE BOX BEAMS WIDE		
	BRIDGE STD. PB	PRESTRESSED COMPOSITE BOX BEAMS WIDE		
45	BRIDGE STD. PB10	TOLERANCES FOR FABRICATION OF PRESTRESSED BEAMS		
46	BRIDGE STD. PB11	ELASTOMERIC BEARING PAD DETAILS	8-14-63	A-11-9-62
	BRIDGE STD.		9-27-79	R-8-1-72
	BRIDGE STD.			
	RE-ISSUE STD. R2A	BRIDGE LIGHTING DETAILS		
	BRIDGE STD. R2B			
47	BRIDGE STD. S1	MISCELLANEOUS DETAILS		
	BRIDGE STD. SH1	STEEL SHOE DETAILS	1-17-72	R-8-2-71
48	BRIDGE STD. T SHEET A	STANDARD TEMPORARY BRIDGE		
49	BRIDGE STD. T SHEET B	STANDARD TEMPORARY BRIDGE		R-12-15-78
	BRIDGE STD.		1-12-60	R-11-13-39
	BRIDGE STD.			
	BRIDGE STD.			
	BRIDGE STD.			
	BRIDGE STD.			
50	ROAD STD. SHEET A	STANDARD PAVEMENT JOINTS		
51	ROAD STD. SHEET B	STANDARD PAVEMENT JOINTS	6-3-81	R-4-1-81
	ROAD STD. SHEET MA	MISCELLANEOUS STANDARDS		
	ROAD STD. SHEET MA	MISCELLANEOUS STANDARDS	9-29-71	R-1-4-71
	ROAD STD. SHEET MB	MISCELLANEOUS STANDARDS		
	ROAD STD. SHEET MB2	MISCELLANEOUS STANDARDS		
	ROAD STD. SHEET	MISCELLANEOUS STANDARDS		
52	ROAD STD. SHEET MC	MISCELLANEOUS STANDARDS		
53	ROAD STD. SHEET MC1	MISCELLANEOUS STANDARDS	9-14-78	R-8-1-76
54	ROAD STD. SHEET MD	MISCELLANEOUS STANDARDS	10-21-76	R-7-1-76
55	ROAD STD. SHEET MD1	MISCELLANEOUS STANDARDS	6-14-74	R-1-2-74
	ROAD STD. SHEET MD	MISCELLANEOUS STANDARDS	6-14-74	R-1-2-74
56	ROAD STD. SHEET ME	MISCELLANEOUS STANCARDS		
57	ROAD STD. SHEET ME2	MISCELLANEOUS STANDARDS	12-22-80	R-10-1-80
	ROAD STD. SHEET	MISCELLANEOUS STANDARDS	11-2-78	R-10-2-78
	ROAD STD. SHEET MH	MISCELLANEOUS STANDARDS		
58	ROAD STD. SHEET MH	MISCELLANEOUS STANDARDS		
	ROAD STD. SHEET MH-1	MISCELLANEOUS STANDARDS		
	ROAD STD. SHEET	MISCELLANEOUS STANDARDS	11-15-79	R-8-1-79
59	ROAD STD. SHEET	MISCELLANEOUS STANDARDS		
	ROAD STD. SHEET MN	MISCELLANEOUS STANDARDS		
60	ROAD STD. SHEET	MISCELLANEOUS STANDARDS	12-22-80	A-10-1-80
	ROAD STD. SHEET MP	MISCELLANEOUS STANDARDS		
	ROAD STD. SHEET	MISCELLANEOUS STANDARDS	6-6-80	R-4-1-80
	ROAD STD. SHEET MQ	MISCELLANEOUS STANDARDS		
	ROAD STD. SHEET MR	MISCELLANEOUS STANDARDS		
61	ROAD STD. SHEET CB2	TEMPORARY CONCRETE BARRIER		
	ROAD STD.	STANDARD REINF. CONCRETE BOX CULVERTS	6-3-81	R-4-1-81
	ROAD STD.	STANDARD REINF. CONCRETE CULVERTS		
62	ROAD STD. SHEET GR1	GUARD RAIL CLASS "A"		
	ROAD STD. SHEET GR	GUARD RAIL CLASS	10-24-80	R-8-1-80
63	ROAD STD. SHEET GR4	GUARD RAIL CLASS "G"		
64	ROAD STD. SHEET GR5	ALUMINUM GUARD RAIL DETAILS	5-17-79	R-2-1-79
65	ROAD STD. SHEET GR6	STEEL TUBE GUARD RAIL DETAILS	12-6-76	R-9-1-76
	ROAD STD. SHEET GR		11-2-78	R-8-1-78
66	ROAD STD. SHEET GR10	GUARD RAIL BURIED ENDS		
	ROAD STD.		6-6-80	R-4-1-80
67	ROAD STD. SHEET 9	TRAFFIC SIGN DETAILS		
	ROAD STD. SHEET 1 DETOURS	STANDARD DETOUR SIGNS		R-4-1-79
	ROAD STD. SHEET 1A DETOURS	STANDARD DETOUR SIGNS		
	ROAD STD. SHEET 1B DETOURS	STANDARD DETOUR SIGNS		
68	ROAD STD. SHEET 2 DETOURS	STANDARD DETOUR SIGNS		
69	ROAD STD. SHEET 2A DETOURS	STANDARD DETOUR SIGNS	5-10-80	R-5-1-80
70	ROAD STD. SHEET 3 DETOURS	STANDARD DETOUR SIGNS	8-26-81	R-8-3-81
71	ROAD STD. SHEET 3A DETOURS	STANDARD DETOUR SIGNS	10-20-80	R-9-1-80
72	ROAD STD. SHEET 4 DETOURS	STANDARD DETOUR SIGNS	5-18-77	R-4-1-77
73	ROAD STD. SHEET 5 DETOURS	STANDARD DETOUR SIGNS	5-18-77	R-4-1-77
	ROAD STD. SHEET 5A DETOURS	STANDARD DETOUR SIGNS	10-20-80	R-9-1-80

* F.H.W.A. APPROVAL PENDING

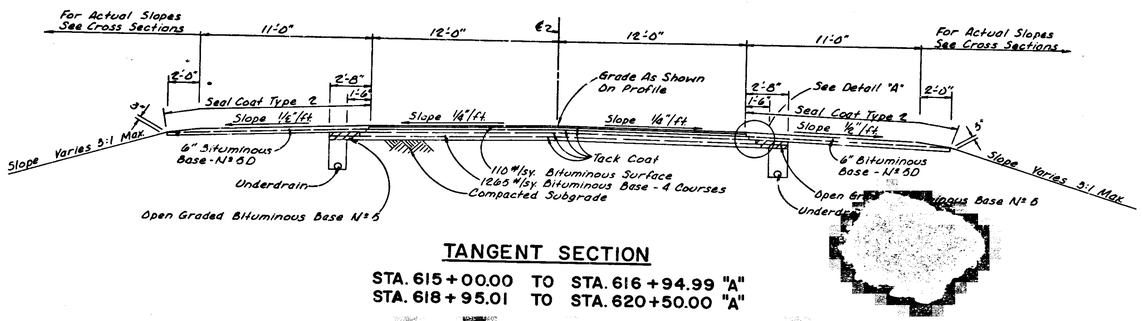
APPROVED 8-7-80
CHIEF HIGHWAY ENGINEER—INDIANA STATE HIGHWAY COMMISSION

RECOMMENDED FOR APPROVAL 8-6-80
ENGINEER OF BRIDGE DESIGN, INDIANA STATE HIGHWAY COMMISSION

FEDERAL HIGHWAY ADMINISTRATION
DEPARTMENT OF TRANSPORTATION
APPROVED:-
DIVISION ADMINISTRATOR DATE

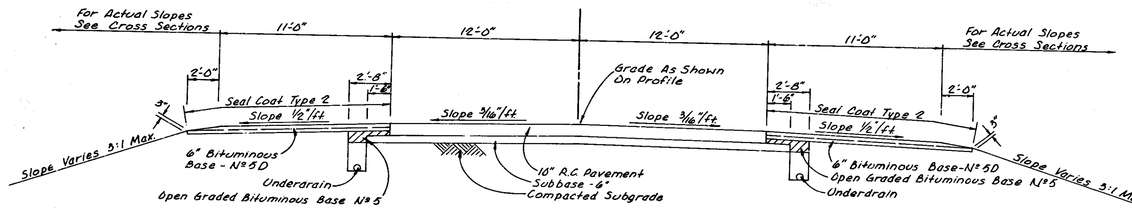
BRIDGE FILE:- 44-70-6634

FEDERAL ROAD REGION NO.	STATE	PROJECT NO.	FISCAL YEAR	SHEET NO.	TOTAL SHEETS
	IND.	F-068-6(1)	1979	2	73



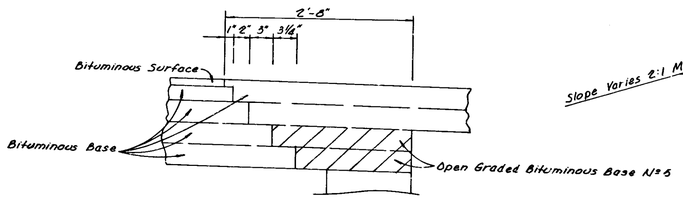
TANGENT SECTION

STA. 615+00.00 TO STA. 616+94.99 "A"
STA. 618+95.01 TO STA. 620+50.00 "A"



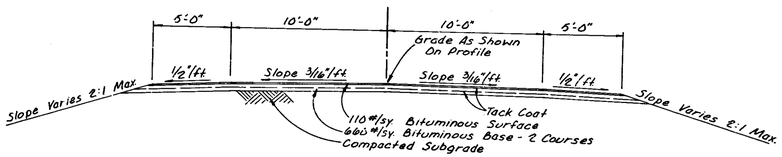
TANGENT SECTION

STA. 616+94.99 TO STA. 617+18.71 "A"
STA. 618+71.29 TO STA. 618+95.01 "A"



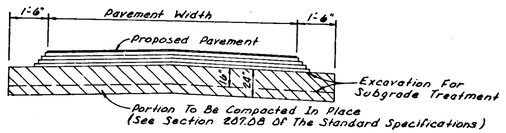
DETAIL "A"

NOT TO SCALE



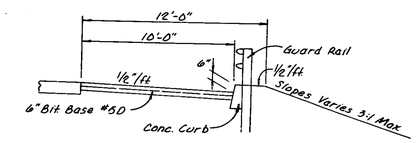
TANGENT SECTION

STA. 50+12.87 TO STA. 51+00.00 "S-1-A"

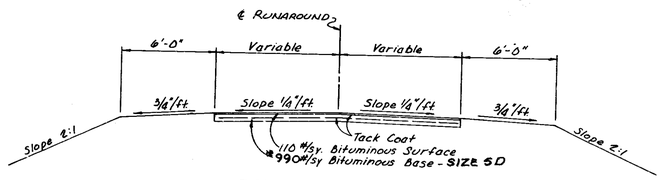


TYPICAL SECTION FOR SUBGRADE TREATMENT

NOT TO SCALE



CURBED SHOULDER



PAVED RUNAROUND

NOT TO SCALE

* This item to be placed if the use of the runaround is to be extended over the winter.

NOTES

1. BITUMINOUS SURFACE SHALL BE HOT ASPHALT CONCRETE SURFACE TYPE "11B"
2. FOR UNDERDRAIN DETAILS SEE MISC. STANDARD SHEET "MN"
3. FOR REINFORCED CONCRETE PAVEMENT DETAILS - SEE STANDARD PAVEMENT JOINTS SHEET A
4. THE QUANTITY CROWN-VETCH SEEDING, SHOWN ON THE ESTIMATE OF QUANTITIES SHEET IS TO BE USED AT THOSE LOCATIONS WHERE THE SLOPES ARE 3:1 OR STEEPER OR IN AN AREA REQUIRING SAND CUT OR SAND FILLS OR AS DIRECTED BY THE ENGINEER.

TYPICAL CROSS SECTIONS

SCALE:- 1/4" = 1'-0"

RECOMMENDED FOR APPROVAL _____ 5/16/80

KENNETH R. WHITE REGISTERED No. 13050 STATE OF INDIANA PROFESSIONAL ENGINEER

Rev.: 02-22-82 Paved Runaround
Rev.: 01-26-82 Do Not Spay Sign Detail and Notes Deleted.

Contr. No. B-13517

PROJECT NO.	LINE	SHEET NO.	TOTAL SHEETS	FILE
F-068-6(1)		2	73	44-70-4636

F-068-4(1) 1979 S 73

PAVED TEMP RUNAROUND TYPE "B" REQ'D WITH TEMP STRUCTURE ON LEFT STA. 618+10 SKEW 25°. LENGTH = 110'. CLEAR ROADWAY = 28'. BRIDGE FLOOR EL. = 907.90

SEC. 13, T-13-N, R-8-E WALKER TWP. RUSH COUNTY

HOMER CROP SERVICE

STRUCTURE N°1 Remove Exist Pipe

ROY JR. & NAOMI RASH

FRANCIS HOUSTON ET UX.

TEMP R/W FOR TEMP RUNAROUND

Guard Rail Type "A" Req'd

P.O.T. 616+40.00 "A" = P.O.T. 20+00.00 "T-1-A"

Temp. Const. Limits

P.O.T. 617+95.00 "A" & TEMP RUNAROUND

CREEK

COMMERCIAL DRIVE CLASS IV W = 20'

EVA ROBINSON

LESTERDALE & FONA M. DURBIN

RUSH CO. FARM BUREAU

P.O.T. 611+00.00 "A"

LINE "A" N 01° 55' E

S.R. #44 (Blktp. over Conc.)

+00 P.I. Runaround

+25.00 P.I. Runaround

P.O.T. 624+00.00 "A"

ROBERT HERON

ONEY COOPER

ROY H. RASH

MELVIN COOKE

FRANK & CUBA ELLIS

CEMETERY

TRUSTEES OF WALKER TWP.

BEGIN PROJECT STA. 615+00.00 "A"

P.O.T. 616+25.50 "A" = P.O.T. 50+00.00 "S-1-A"

P.I. 21+50.00 "T-1-A" Δ = 5° 00' Lt.

Class II Drive W=12'

SPECIAL PUBLIC ROAD APPROACH

CHARLES E. OSTHOLTHOFF ET AL.

TEMP R/W FOR CHANNEL CLEARING

WILLIAM R. & SUSAN HOUSTON

FIRST FEDERAL SAVINGS & LOAN ASSOC.

JACK E. & ANNA O. RAFFERTY

JOHN HOUSTON

END PROJECT STA. 620+50.00 "A"

P.O.T. 620+60.4 "A" = P.O.T. 50+00.00 "S-2-A"

P.O.T. 624+00.00 "A"

100 Lft. Guard Rail Type "G" w/ End Treatment Req'd.-Lt

90 Lft. Guard Rail Type "G" w/ End Treatment Req'd.-Rt (30 Lft to be Shop Curved)

65 Lft of Guard Rail Type "G" w/ Terminal Sec. Req'd.-Lt

55 Lft of Guard Rail Type "G" w/ End Treatment Req'd.-Rt

30 Lft. of Guard Rail Type "A" Req'd on Lt

BRIDGE LIMITS

+80 El.= 906.83 V.C.=120'

+95 El.= 909.73 V.C.= 310'

+00 El.= 908.30 V.C.= 100'

+00 El.= 907.75 V.C.=50'

+25 El.= 907.75 V.C.=50'

+00 El.= 906.6

+25, El.= 908.0

+3.80 %

0.00 %

+0.40 %

PROPOSED GRADE FOR TEMP RUNAROUND (PLOTTED 10' ABOVE DATUM)

+0.27 %

+1.35 %

-0.70 %

-2.10 %

+0.49 %

+00 El.= 902.10

3' Bott. Ditch, Lt

+00, El.= 898.10

MAX. H.W. = 903.0

AVER. H.W. = 899.8

AVER. L.W. = 894.1

332 Sys. of Sodding Req'd. Lt

110 Sys. of Sodding Req'd - Lt. in Island

114 Sys. of Lawn Sodding Req'd - Rt.

STRUCTURE N° 2 Inlet Type J-10 & 40' of 12" Pipe Req'd.

STRUCTURE N° 3 12" Pipe Catch Basin & 6' of 12" Pipe Req'd.

STRUCTURE N° 4 Inlet Type M-10 & 72' of 12" Pipe Req'd.

STRUCTURE N° 5 Inlet Type M-10 & 72' of 12" Pipe Req'd.

STRUCTURE N° 6 Inlet Type M-10 & 90' of 12" Pipe Req'd.

STRUCTURE N° 7 70' of 6" Pipe Req'd

STRUCTURE N° 8 70' of 6" Pipe Req'd

ALL R/W TO BE AS SHOWN. ALL R/W DESCRIBED FROM LINE "A" EXCEPT AS SHOWN.

SCALE: 1"=50'

ORIGIN OF DATUM - Bronze Disc. On S.E. Abut. R.R. Bridge over Mud Creek @ Homer Ind. U.S.C. & G.S. Y 244. El.: 908.433

T.B.M. - Chisled Square In Top of N.W. Wing Wall of Bridge Lt. Sta. 617+ El.= 907.20

B.M.#1 - Bf. Sgk. In 12" Hard Maple 97' Rt. Sta. 614+65 El.= 905.92

B.M.#2 - Chisled Square In S.W. Cor. of Old Abandoned Gas Pump Isl. 106' Lt. Sta. 621+15 El.= 908.10

B.M.#3 - Bf. Sgk. In 30" Ash 96' Lt. Sta. 623+44 El.= 906.48

BALANCE NO. 1

CUT 1900 CYS.
FILL +15% 1849 CYS.
WASTE 51 CYS.

THE ABOVE BALANCE INCLUDES 556 CYS. FOR BENCHING AND INCLUDES THE EARTHWORK FOR LINE "T-1-A".

Rev.: 05-06-81 ; # Section Line, Property Line, Temp. R/W
Rev.: 8-19-81, Class II Dr., 619+74 Rt., Type 'G' Guard Rail

Cont. No. B135/7

F-068-4(1) "A" S 73 44-70-4084

SEC. 13, T-18-N, R-8-E
WALKER TWP.
RUSH COUNTY

TEMP. R/W FOR CHANNEL CLEARING

CHARLES E. OSTHOLTHOFF ET AL.

(weeds & brush)

P.O.T. 53+00.00 "S-1-A"

½-¼ Cor. (G/L+28.65' /15.38')

P.O.T. 50+00.00 "S-1-A"
P.O.T. 616+25.50 "A"

COUNTY RD. 725 W (Blacktop)

S 89° 21' 30" E

Approx. R/W

Approx. ℄

S 00° 59' E

TRUSTEES OF WALKER TWP. CEMETERY (weeds)

ROY RASH JR. ET UX.

FRANK & CUBA ELLIS

BEGIN CONSTRUCTION STA. 50+12.87 "S-1-A"

END CONSTRUCTION STA. 51+00.00 "S-1-A"

ALL R/W TO BE AS SHOWN. ALL R/W DESCRIBED FROM LINE "S-1-A" EXCEPT AS SHOWN.

SCALE: 1"=50'

B.M.#1- Boat Spk. In 12" Hard Maple 97' Rt. Sta. 614+65 El.=905.92

P.O.T. 53+00.00 "S-1-A"

"S-1-A"

+75
EL = 904.58
V.C. = 50'

+12.87, El.=902.16

-4.47%

-1.50%

+00, El.=904.00

910
900

50 51 52 53

SEC. 13, T-18-N, R-8-E
WALKER TWP.
RUSH COUNTY

F-068-9(1) 1979 4 73

CLAUDE WARFIELD

JACK E. & ANNJAO RAFFERTY

ROBERT J. & SALLY A. RANKIN

RALPH NEWBOLD

P.O.T. 50+00.00 "S-2-A"
P.O.T. 620+60.1 "A"

P.O.T. 47+00.00 "S-2-A"

COUNTY RD. 715 W

STA. N 0+0

P.O.T. 52+85.00 "S-2-A"

PENN CENTRAL R.R.

ROGER HAGGENMEYER

EVA ROBINSON

FIRST FEDERAL SAVINGS & LOAN ASSOC.

WILLIAM R. & SUSAN HOUSTON

Buried Tele. Cable

Open II Drive

TEMP. R/W FOR TEMP. RUNAROUND

FRANCIS HOUSTON FT UX

TEMP. R/W FOR CHANNEL CLEARING

CHARLES E. OSTHOLTHOFF ET AL.

ALL R/W TO BE AS SHOWN. ALL R/W DESCRIBED FROM LINE "A" EXCEPT AS SHOWN.

SCALE: 1"=50'

B.M.#2- Chiseled Square In S.W. Cor. Of Old Abandoned Gas Pump Island. 186' Lt. Sta. 621+15 El.=908.10

P.O.T. 47+00.00 "S-2-A"

P.O.T. 54+85.00 "S-2-A"

"S-2-A"

910
900

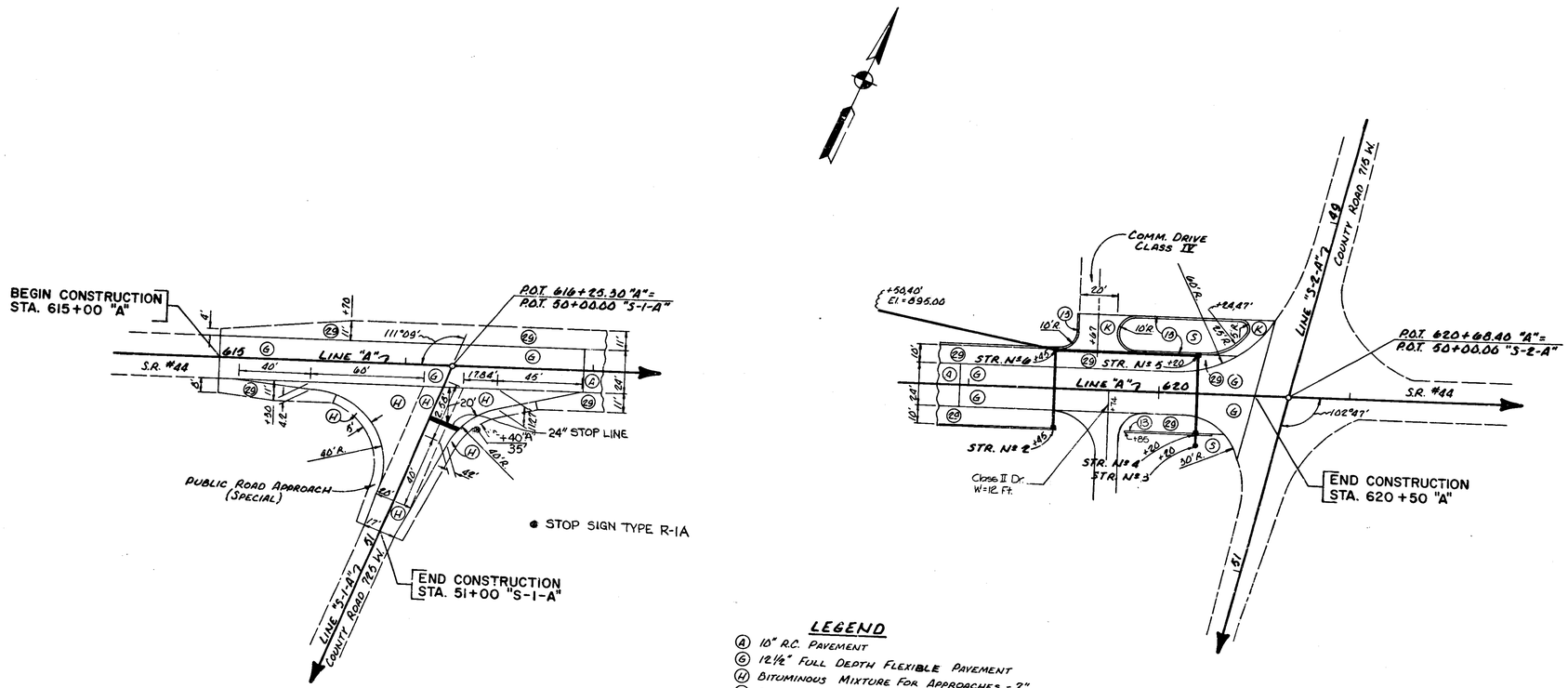
47 48 49 50 51 52 53

Rev.: 05-06-81; ℄ Section Line, Property Line, Temp. R/W
Rev: 8-18-81; Class II Dr. 619+74 Rt.

Contr. No B-13517

F-068-9(1) 4 73 44-70-66.58

FEDERAL ROAD REGION NO.	STATE	PROJECT NO.	FISCAL YEAR	SHEET NO.	TOTAL SHEETS
5	IND.	F-068-6(1)	1979	5	73



LEGEND

- (A) 10" R.C. PAVEMENT
- (G) 12½" FULL DEPTH FLEXIBLE PAVEMENT
- (H) BITUMINOUS MIXTURE FOR APPROACHES - 7"
- (K) BITUMINOUS MIXTURE FOR APPROACHES - 6"
- (S) SODDING
- (13) CONCRETE CURB
- (29) BITUMINOUS SHOULDER - 6"

DETAILS

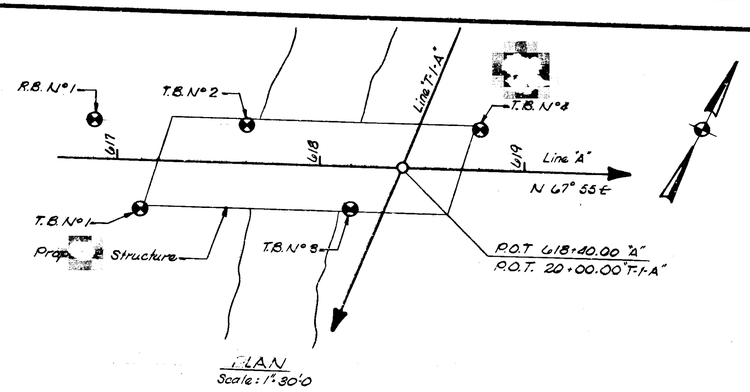
SCALE: 1" = 30'

44-70-6634
B-13517

Rev.: 2-22-82 STOP LINE, STOP SIGN TYPE R-1A
Rev: 8-18-81 ; Class II Dr. 619+74 Rt. ; Conc. Crub Limits

F-068-6(1) SHEET N° 5 OF 73

TP107 1976



PLAN
Scale: 1"=30'-0

TEST BORING N°	T.B. N°1
STATION (A)	617+12
OFFSET	23' Rt.
SURFACE ELEV.	898.4

Sample N°	Elev.	N	Description
	898.4		Ground Level
	897.4		
1	895.9	2	Dark brown moist soft silty clay loam (Top Soil)
	895.4		
2	893.4	2	Brownish gray very moist very soft silty clay w/trace gravel (backfill for wingwall)
3	890.9	4½	
	889.4		
4	888.4	14	Gray moist very soft clay loam w/ sand seams (backfill for wingwall)
	887.4		
	886.4		Gray wet very soft silty clay w/ little gravel (backfill for wingwall)
5	883.4	25	
	880.4		Gray moist to slightly moist very stiff loam w/trace to little gravel
6	878.4	22	
	877.4		Gray slightly moist very stiff silty loam w/little gravel
7	873.4	20	
	872.4		
8	868.4	41	Gray wet dense coarse sand w/little gravel
9	863.4	46	
10	858.4	13	
	854.4		
11	853.4	98	Golden brown slightly moist hard [51 for .2"] sandy loam
12	849.7		Tan hard fine-grained slightly vuggy dolomatic limestone
	847.0		
	844.7		Light gray hard medium-grained limestone w/stylolite

End of Boring
Depth of Boring ~ 58.7'

TEST BORING N°	T.B. N°2
STATION (A)	617+68
OFFSET	20' Lt.
SURFACE ELEV.	898.4

Sample N°	Elev.	N	Description
	898.4		Ground Level
1	894.9	3	Brown very moist very soft silty clay w/trace gravel
	893.4		
2	892.4	8	
3	889.9	1	Brown wet very loose sand
4	887.4	4	
	886.6		Gray very moist very soft silty clay w/ leaves & wood
5	882.4	17	Gray very moist soft silty clay loam w/ little gravel & sticks of wood
	880.4		
6	877.4	29	Gray moist very stiff loam w/trace to little gravel (Till)
	875.9		
7	872.4	82	Multi-colored (clean) to gray wet dense to very dense sandy gravel
8	867.4		[84 for .9']
	864.9		Brown moist hard silty clay loam w/trace gravel (older weathered Till)
	863.7		
9	862.4	50	
	860.4		Golden brown wet dense fine sand
10	857.4	89	Golden brown slightly moist hard sand loam w/trace gravel (older weathered Till)
11	852.4	32	℄ El. 851.4
	850.4		Apparently hard limestone or dolomite bedrock

End of Boring
Depth of Boring ~ 48'

TEST BORING N°	T.B. N°3
STATION (A)	618+15
OFFSET	22' Rt.
SURFACE ELEV.	899.1

Sample N°	Elev.	N	Description
	899.1		Ground Level
1	896.1	5	Dark brown & gray very moist ℄ El. 895.6 soft silty clay loam
2	893.6	3	Gray very moist very soft silty clay ℄ El. 893.1
3	891.1	18	Gray moist stiff silty clay loam w/ ℄ El. 890.6 & trace gravel
4	888.6	27	
5	883.6	18	Gray slightly moist very stiff to hard loam w/trace gravel (Till)
6	878.6	61	
	875.5		
7	873.6	9	Gray wet loose fine sand w/trace gravel (source of Artesian water)
	872.1		
8	868.6	34	Gray wet dense fine to coarse gravelly sand w/ thin layers of coarse gravel
	865.1		
9	863.6	35	Multi-colored clean wet dense coarse sand w/trace gravel
	862.1		
10	858.6	58	Brown moist hard silty clay loam w/ trace to little gravel (older weathered Till)
	857.1		
11	853.6	76	Brown moist hard clay loam w/ little to some gravel
12	848.6	48	℄ El. 848.1

End of Boring
Depth of Boring ~ 51'

TEST BORING N°	T.B. N°4
STATION (A)	618+78
OFFSET	21' Lt.
SURFACE ELEV.	906.0

Sample N°	Elev.	N	Description
	906.0		Ground Level
1	903.5	4	Brown moist soft to medium stiff silty clay loam w/trace gravel (Fill)
2	901.0	8	
3	898.5	7	℄ El. 898.0
4	896.0	7	Gray very moist medium stiff silty clay loam w/ thin layers of silty loam (natural ground)
	894.0		
5	891.0	10	
6	886.0	10	Gray very moist to moist medium stiff to very stiff loam w/trace gravel (Till)
7	881.0	18	
8	876.0	25	
	874.0		
9	871.0	26	Gray wet medium dense coarse sand w/ little gravel
10	866.8	88	Brown moist hard silty clay loam w/ ℄ El. 865.0 trace gravel (old weathered till)
	866.0		
	862.8		Gray wet dense coarse sand w/ trace gravel
11	861.0	46	Light & dark brown mottled moist hard silty clay loam w/ trace gravel (older weathered till)

End of Boring
Depth of Boring ~ 45'

TEST BORING N°	R.B. N°1
STATION (A)	616+88
OFFSET	20' Lt.
SURFACE ELEV.	906.1

Sample N°	Elev.	N	Description
	906.1		Ground Level
1	903.6	5½	Brown moist soft silty clay loam (Fill)
	902.1		℄ El. 904.1
2	901.1	4	Brown moist soft clay loam (Fill)
	899.6		
3	898.6	4	
4	896.1	9	Gray moist to slightly moist soft to medium stiff silty clay (natural ground)
5	893.6	4½	℄ El. 894.1
	892.1		
6	891.1	7	Brown & gray mottled moist soft to medium stiff silty clay loam w/trace ℄ El. 890.6 gravel
7	888.6	17	Gray moist very stiff loam w/ trace to little gravel (Till)
8	886.1	15	

End of Boring
Depth of Boring ~ 20'

N - Indicates the number of blows required to drive a 1⅜" I.D., 2" O.D. Split Spoon Sampler 12" by means of a 140 lb. weight falling 30".

SOIL BORINGS

INDIANA STATE HIGHWAY COMMISSION

SCALE:- As Noted DATE:- 5-16-80

SUBMITTED FOR APPROVAL Norman D. Patel

DRAWING:- OF SHEET:- 6 OF 78

PROJECT:- F-068-6(1)

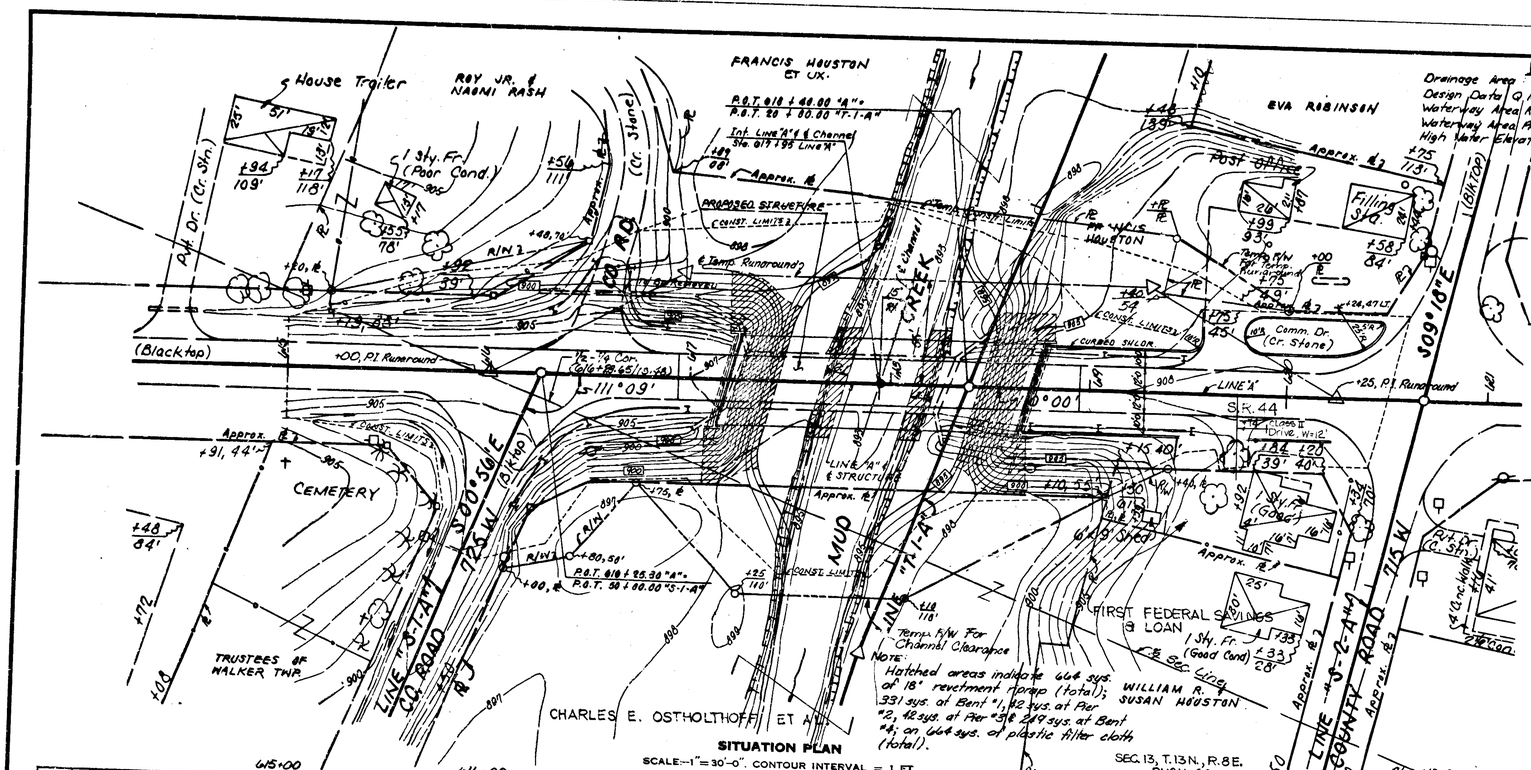
CONTRACT NO. B-13517

BRIDGE FILE:- 46-70-6634

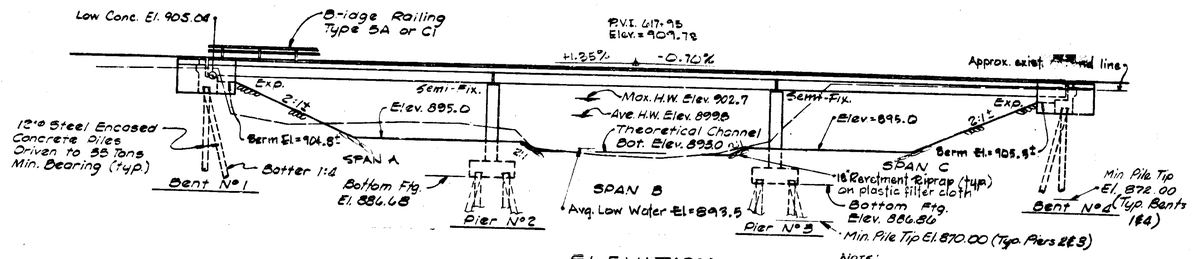
NORMAN D. PATEL REGISTERED No 13050 STATE OF INDIANA PROFESSIONAL ENGINEER

DESIGNED JLF C'K'D
DRAWN JLF 10-78 C'K'D DCA 2/80
TRACED C'K'D

TP118

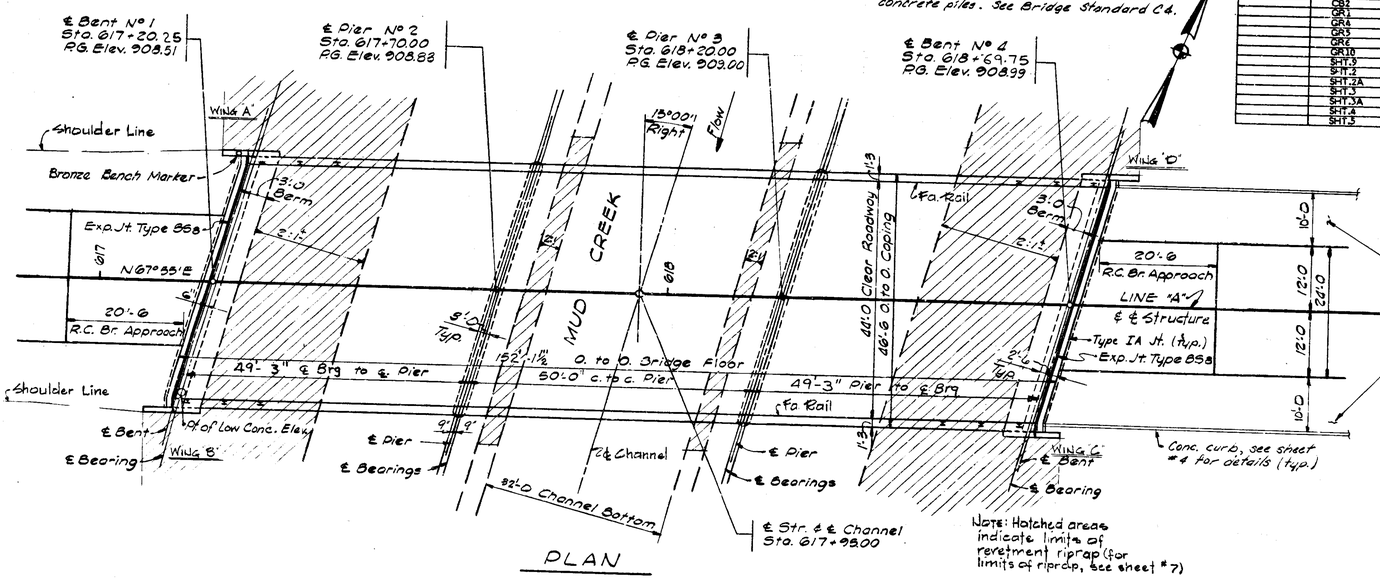

House Trailer
ROY JR. & NAOMI RASH
FRANCIS HOUSTON ET UX.
EVA ROBINSON
Pvt. Dr. (Cr. Stone)
1 sty. Fr. (Poor Cond.)
Post Office
Filling Sta.
Comm. Dr. (Cr. Stone)
(Blacktop)
Approx. ℄
℄ Proposed Structure
Const. Limits
℄ Temp. Runaround
Temp. R/W for Temp. Runaround
℄ Curbed Sub-Dr.
Tot. Line "A" & ℄ Channel Sta. 619+99 Line "A"
P.O.T. 618+40.00 "A" to P.O.T. 20+80.00 "T-1-A"
P.O.T. 618+26.30 "A". P.O.T. 20+80.00 "S-1-A"
Temp. R/W for Channel Clearance
Line "A" & Structure
Line "T-1-A"
Line "S-1-A"
Mud Creek
S.R. 44
Class II Drive, W=12'
County Road #2
Approx. ℄ Sec. Line
FIRST FEDERAL SAVINGS & LOAN
1 Sty. Fr. (Good Cond.)
WILLIAM R. & SUSAN HOUSTON
CHARLES E. OSTHOLTHOFF ET AL
TRUSTEES OF WALKER TWP.
Cemetery
Sta. 17+72
Sta. 20+00
Sta. 25+00
Sta. 30+00
Sta. 35+00
Sta. 40+00
Sta. 45+00
Sta. 50+00
Sta. 55+00
Sta. 60+00
Sta. 65+00
Sta. 70+00
Sta. 75+00
Sta. 80+00
Sta. 85+00
Sta. 90+00
Sta. 95+00
Sta. 100+00
Sta. 105+00
Sta. 110+00
Sta. 115+00
Sta. 116+00
Sta. 117+00
Sta. 118+00
Sta. 119+00
Sta. 120+00
Sta. 121+00
Sta. 122+00
Sta. 123+00
Sta. 124+00
Sta. 125+00
Sta. 126+00
Sta. 127+00
Sta. 128+00
Sta. 129+00
Sta. 130+00
Sta. 131+00
Sta. 132+00
Sta. 133+00
Sta. 134+00
Sta.

STRUCTURE TO BE BUILT TO A 810 FT. VERTICAL CURVE



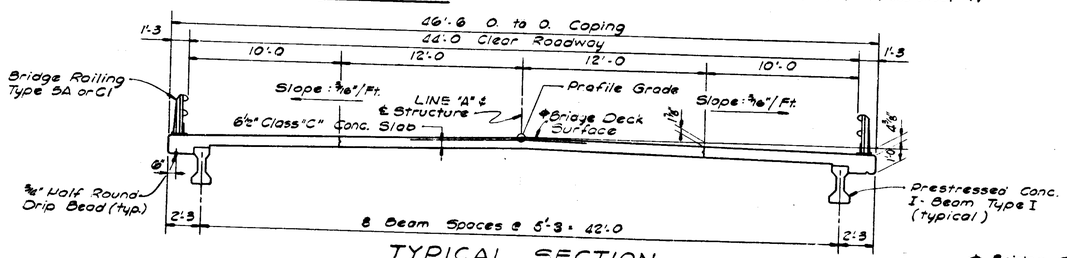
ELEVATION

Note: As an alternate, precast, prestressed concrete piles may be used in place of steel encased concrete piles. See Bridge Standard C4.



PLAN

Note: Hatched areas indicate limits of revetment riprap (for limits of riprap, see sheet # 7)



TYPICAL SECTION

Scale: ¼" = 1'-0

◆ Bridge Deck Surface 1½" Mod. P.C.C. or 2¼" Dense Concrete

DESIGNED RBM 3-15 CK'D
DRAWN J.E. CK'D TJN
TRACED CK'D

STANDARD DRAWINGS

BRIDGE	ROAD	PURPOSE
BR1		ALUMINUM RAILING - TYPE 3A
BR2		ALUMINUM RAILING DETAILS
BR3		STEEL RAILING - TYPE C1
BR4		STEEL RAILING DETAILS
C1		PILES, REINF. BAR NOTES
C3		TYP. A JT. JOINT, TYPE "A" EXPANSION JT.
C4		PRESTRESSED PRECAST CONC. PILES
M2		TEMPORARY RUNAROUND
PB1		TYPE I CONC. I BEAM
PB10		I-BEAM DETAILS
PB11		ELASTOMERIC BEARING PAD TYPE I
S1		B-BORROW FOR STR. BACKFILL
T. SHT. A		STANDARD TEMPORARY BRIDGE
T. SHT. B		STANDARD TEMPORARY BRIDGE
	A	STANDARD PAVEMENT JOINTS
	MA	R.C. APPROACH DETAILS
	MC	CASTING DETAILS
	MC1	CASTING DETAILS
	MD	INLETS
	MD1	MANHOLES
	ME	CURB
	ME2	PIPE E JECTIONS
	M11	TEMPORARY RUNAROUND
	MN	STRUCTURE BACKFILL, UNDERDRAIN
	MP	MISC. PIPE DETAILS
	CB2	TEMPORARY CONC. BARRIER
	GR1	CLASS "A" GUARD RAIL
	GR4	CLASS "D" GUARD RAIL
	GR5	ALUMINUM GUARD RAIL DETAILS
	GR6	STEEL TUBE GUARD RAIL DETAILS
	GR10	GUARD RAIL BURIED ENDS
	SHT.0	TRAFFIC SIGN DETAILS
	SHT.2	STANDARD DETOUR SIGNS
	SHT.2A	STANDARD DETOUR SIGNS
	SHT.3	STANDARD DETOUR SIGNS
	SHT.3A	STANDARD DETOUR SIGNS
	SHT.4	STANDARD DETOUR SIGNS
	SHT.5	SIGN DESIGN DETAILS

DESIGN DATA

DESIGNED FOR HS20-44 LOADING IN ACCORDANCE WITH 1977 A.A.S.H.T.O. SPECIFICATIONS AND 1978 INTERIMS.

DEAD LOAD: ACTUAL LOAD PLUS 35 LBS. PER SQ. FT. FOR FUTURE WEARING SURFACE.

GENERAL NOTES

EXISTING STRUCTURE IS A TWO SPAN STEEL BEAM BRIDGE TO BE REMOVED.

DEPTH OF FOOTINGS TO BE EXTENDED IF FOUND NECESSARY. SEE ARTICLE 206.11 (C) OF SPECIFICATIONS.

PILES SHALL HAVE MINIMUM BEARING VALUE SHOWN ON DETAIL DRAWINGS. DETERMINE PILE LENGTHS BY ARTICLE 701.02 (A) OF SPECIFICATIONS.

FOR DETAILS OF STEEL ENCASED CONCRETE PILES, OR PRESTRESSED CONCRETE PILES AS AN ALTERNATE, SEE BRIDGE STANDARD C1, AND C4.

PILES SHALL BE DRIVEN TO ELEVATION SHOWN ON PLANS OR BELOW IF NECESSARY TO OBTAIN REQUIRED BEARINGS.

REINFORCING STEEL COVERING SHALL BE 2-1/2" IN TOP AND 1" MIN. IN BOTTOM OF FLOOR SLABS, 3" IN FOOTINGS EXCEPT BOTTOM STEEL WHICH SHALL BE 4", AND 2" IN ALL OTHER PARTS, UNLESS NOTED.

CONCRETE IN FOOTINGS TO BE CLASS "B".

CONCRETE IN SUPERSTRUCTURE TO BE CLASS "C."

CONCRETE IN END BENTS, BENT CAPS, WINGS PIER STEM IN PRECAST CONCRETE PILES, AND IN STEEL ENCASED CONCRETE PILES TO BE CLASS "A".

CONCRETE IN STRUCTURE NOT NOTED ABOVE TO BE CLASS "A".

CONTINUOUS CONCRETE POURS SHALL BE REQUIRED BETWEEN CONSTRUCTION JOINTS AS SHOWN IN DETAIL PLANS.

WATERPROOF BACKS OF MUDWALLS, AND WINGWALLS IN ACCORDANCE WITH ARTICLE 702.22 OF THE SPECIFICATIONS.

BEVEL FORMS 1/4" UNDER COPINGS; AND CHAMFER EXPOSED EDGES 1" UNLESS NOTED.

RIPRAP AT LOCATIONS SHOWN ON THE LAYOUT.

TOLERANCE IN POSITION OF PILE HEAD MAXIMUM 2".

ONLY THE TOP OF PIER AND END BENT CAPS, FRONT FACE OF MUDWALLS, FACE OF END DIAPHRAGMS, FACE OF DECK COPING, AND UNDERSIDE OF THE BRIDGE FLOOR FROM COPING FACE ON OUTSIDE BEAM, OUTSIDE FACE OF EXTERIOR CONCRETE BEAMS TO BE SEALED.

THE QUANTITY CROWN-VETCH SEEDING, SHOWN ON THE ESTIMATE OF QUANTITIES SHEET IS TO BE USED AT THOSE LOCATIONS WHERE THE SLOPES ARE 3:1 OR STEEPER OR IN AN AREA REQUIRING SAND CUT OR SAND FILLS OR AS DIRECTED BY THE ENGINEER.

FOR SODDING QUANTITIES, SEE TABLE ON SHEET NO. 13.

GENERAL PLAN

CONT. COMPOSITE PRESTR. CONC. I-BEAM BRIDGE
3 SPANS 49'-3, 50'-0, 49'-3 SKEW: 15°00 Rt.
44'-0 CLEAR ROADWAY
S.R. 44 OVER MUD CREEK

INDIANA STATE HIGHWAY COMMISSION

RUSH COUNTY

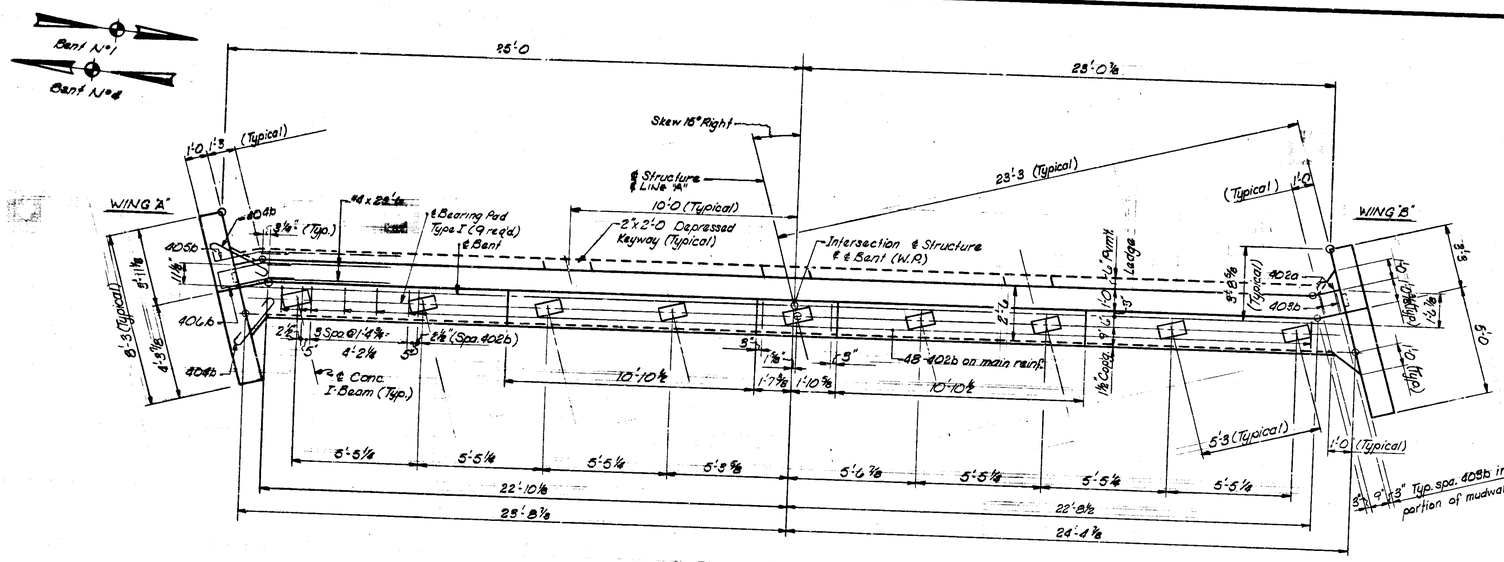
SCALE: 3/32"=1'-0 Unless Noted DATE: 3-16-80

SUBMITTED FOR APPROVAL Ramesh R. Bhatt

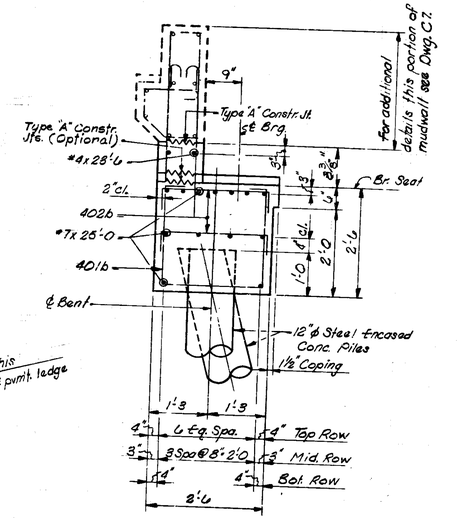
DRAWING: 22 OF 68 SHEET: 8 OF 78
PROJECT: F-068-6(1)
CONTRACT NO. B-13517
BRIDGE FILE: 44-70-6036

RAMESH R. BHATT REGISTERED No. 13050 STATE OF INDIANA PROFESSIONAL ENGINEER

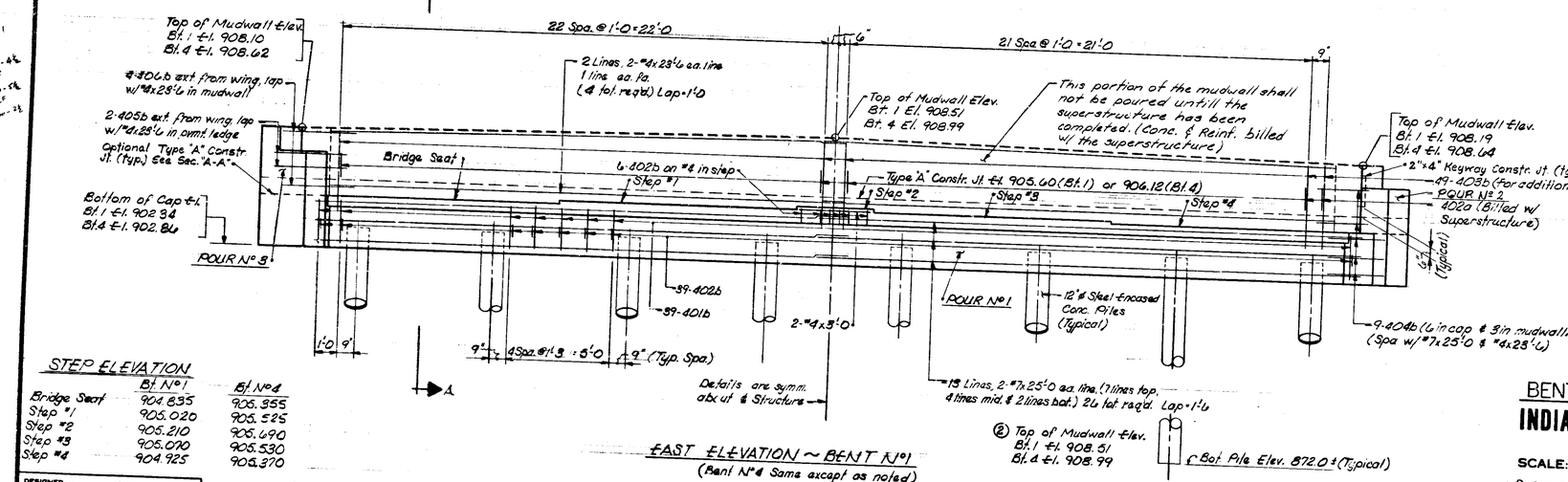
Rev.: 02-22-82 General Notes
Rev.: 01-26-82 General Notes



PLAN ~ BENT N°1
(Bent N°4 Same except as noted)



SECTION A-A
Scale: ⅜" = 1'-0



EAST ELEVATION ~ BENT N°1
(Bent N°4 Same except as noted)

Notes:
For Reinforcing Bar Notes see Br. Std. C1.
For Bearing Pad Type I, see Br. Std. PB11.
For Type A Construction Joint, see Br. Std. C8.
For additional details & Bill of Materials, see Dwg. C-4

STEP ELEVATION

	Bt. N°1	Bt. N°4
Bridge Seat	904.835	905.355
Step #1	905.020	905.525
Step #2	905.210	905.690
Step #3	905.070	905.530
Step #4	904.925	905.370

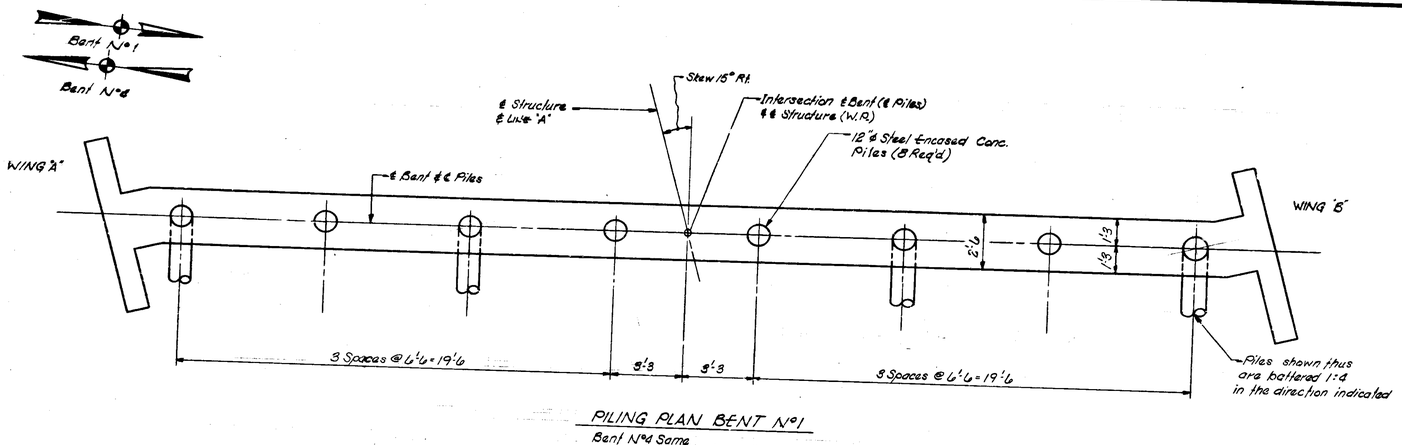
DESIGNED ____ C'K'D ____
DRAWN JLF 10-77 C'K'D RP
TRACED ____ C'K'D ____

BENT N°1 & BENT N°4 DETAILS
INDIANA STATE HIGHWAY COMMISSION

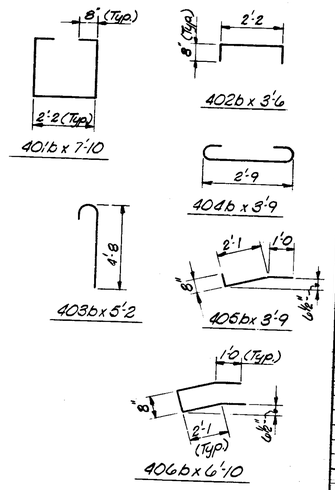
SCALE:- ⅜" = 1'-0 U.N. DATE:- 5-16-80
SUBMITTED FOR APPROVAL Raymond Peters
DRAWING:- C8 OF C8 SHEET:- 9 OF 78
PROJECT:- F-068-6(1)
CONTRACT NO. 8-13517
BRIDGE FILE:- 44-70-0684

REGISTERED No. 13050 STATE OF INDIANA PROFESSIONAL ENGINEER

TP118

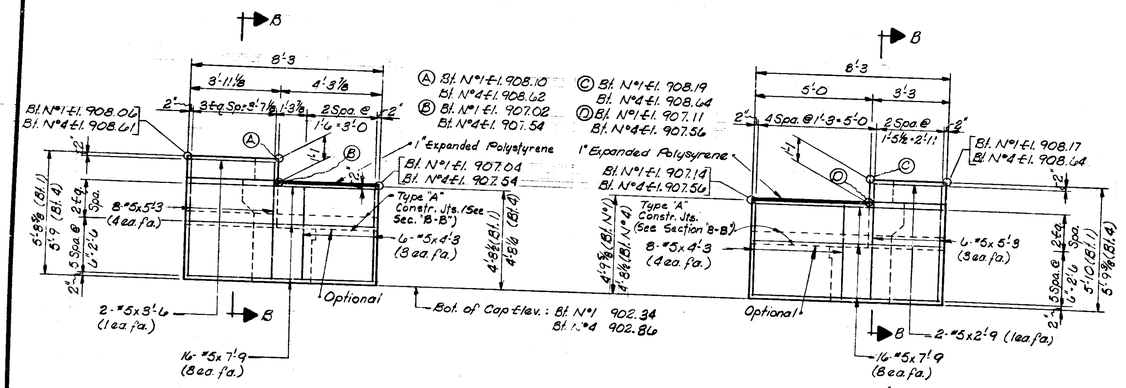


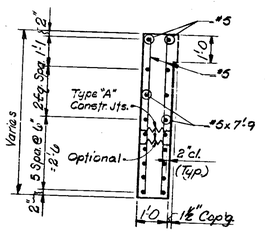
PILING PLAN BENT N°1
Bent N°4 Same
Scale: 3/8" = 1'-0



BILL OF MATERIALS ~ BENT N°1
(Bent N°4 Same)

REINFORCING STEEL			
Size & Mark	N° of Bars	Length	Weight (lbs)
#7	26	25'-0	
	TOTAL #7		1,329
#5	32	7'-9	
#5	14	5'-8	
#5	14	4'-8	
#5	2	3'-6	
#5	2	2'-9	
	TOTAL #5		410
401b	39	7'-10	
402b	98	3'-6	
403b	49	5'-2	
404b	18	3'-9	
405b	4	3'-9	
406b	8	6'-10	
#4	4	28'-6	
#4	2	3'-0	
	TOTAL #4		749
	TOTAL REINF.		2,488
CONCRETE CLASS "A"			CYS.
POUR N°1 ~ BENT N°1			15.2
POUR N°1 ~ BENT N°4			15.1
POUR N°2			.6
POUR N°3			.6
TOTAL CLASS "A" CONC. ~ BENT 1			16.4
TOTAL CLASS "A" CONC. ~ BENT 4			16.3
MISCELLANEOUS			Quan.
12"ø Steel Encased Conc. Piles 8@32 Lft. long ea. (approx.)			256 Lft.





SECTION B-B
Scale: ½" = 1'-0

NOTES:
For "Reinforcing Bar Notes," see Br. Std. C1.
For additional notes and details, see Dwg. C-3

BENT N°1 & BENT N°4 DETAILS & BILL OF MATERIALS

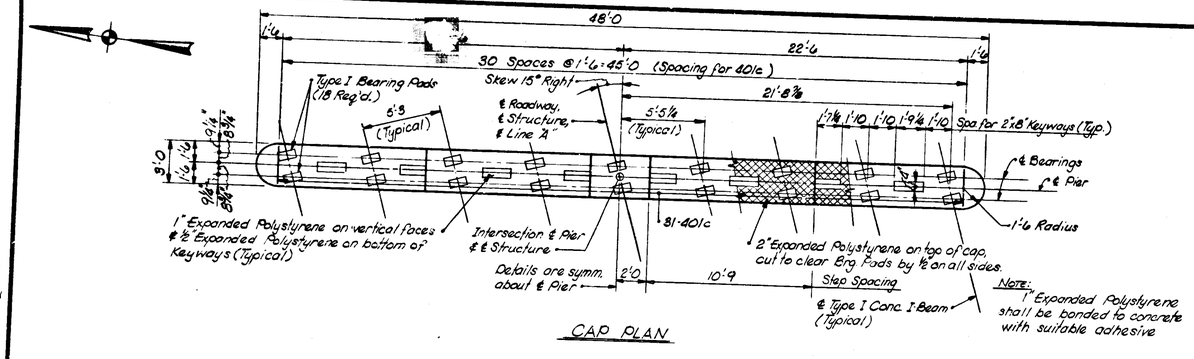
INDIANA STATE HIGHWAY COMMISSION

SCALE:- As Noted DATE:- 5-16-80
Submitted for Approval Roman Dobrzyn
DRAWING:- C 4 OF C 8 SHEET:- 10 OF 78
PROJECT:- F-068-6(1)
CONTRACT NO. B-13517
BRIDGE FILE:- 44-70-0634

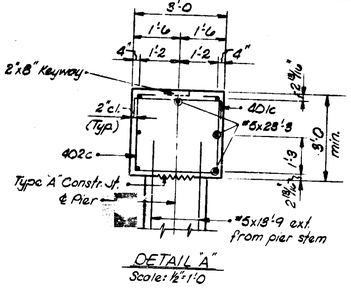
ROMAN V. PATEL REGISTERED No. 13050 STATE OF INDIANA PROFESSIONAL ENGINEER

DESIGNED _____ C'K'D _____
DRAWN JLF 10-79 C'K'D R.P.
TRACED _____ C'K'D _____

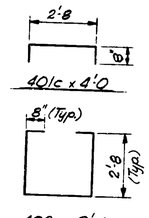
TP118



CAP PLAN

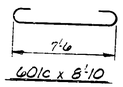


DETAIL "A"
Scale: ½"=1'-0



Mark	"R"	"a"	"b"	Length
502c	1'-3½	4"-1	1"-1	6'-3
503c	9⅜"	2'-5½	1'-1½	4'-8

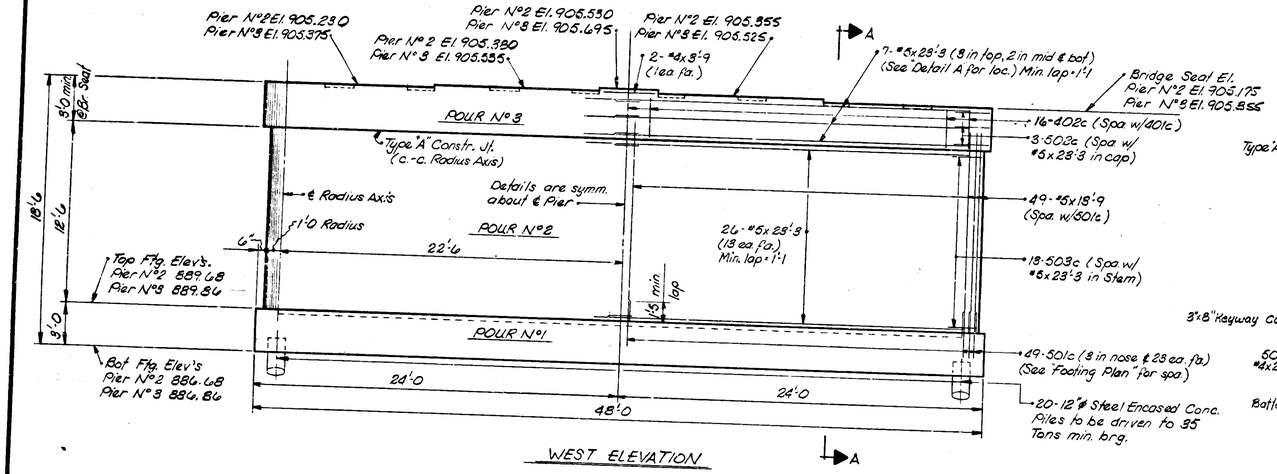
502c x 6'-3
503c x 4'-8



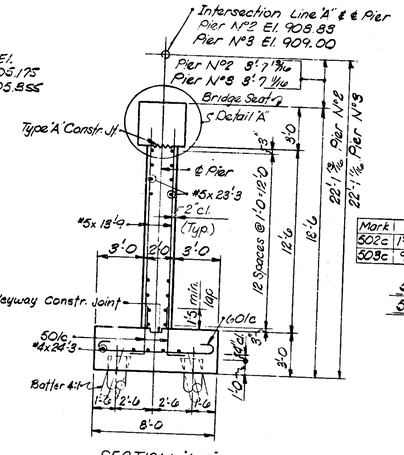
BILL OF MATERIALS ~ PIER N°2
(Pier N°3 Same)

REINFORCING STEEL

Size & Mark	N° of Bars	Length	Weight (lbs.)
601c	77	8'-10	
Total #6			1,022
501c	98	3'-11	
502c	6	6'-9	
503c	26	4'-8	
#5	66	23'-3	
#5	98	13'-9	
#5	64	7'-6	
Total #5			4,078
401c	31	4'0	
402c	31	9'-4	
#4	16	24'-3	
#4	2	3'-9	
Total #4			540
Total Reinf.			5,635
CONCRETE			CYS.
Class 'B' Concrete in Footing (Pour N°1)			28.4
Class 'A' Concrete Pour N°2			48.1
Pour N°3			16.4
Total Class 'A' Concrete			59.5
MISCELLANEOUS			QUAN.
12"ø Steel Encased Conc. Piles 20@20'-0 long ea.			400 Lft.

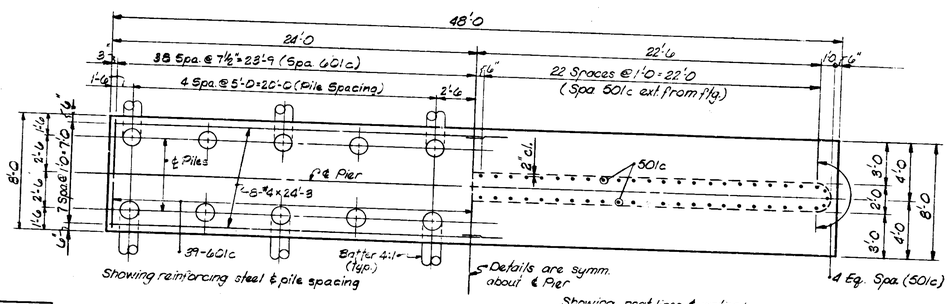


WEST ELEVATION



SECTION "A-A"

Maximum Soil Pressure Without Piles = 1.7 Ton/Sq.Ft.



FOOTING PLAN

Notes:
For "Reinforcing Bar Notes," see Br. Std. C1.
For Type "A" Construction Joint, see Br. Std. C9.
For Bearing Pad Type I, see Br. Std. PB11.

DESIGNED E.O.T. '80 CK'D
DRAWN J.L.F. '80 CK'D T.W.N. '80
TRACED CK'D

PIERS N°2 & 3 DETAILS & BILL OF MATERIALS

INDIANA STATE HIGHWAY COMMISSION

SCALE:- ½"=1'-0 U.N. DATE:- 8-16-80

SUBMITTED FOR APPROVAL: Roman S. Kelly

DRAWING:- C5 OF C7 SHEET:- 11 OF 78

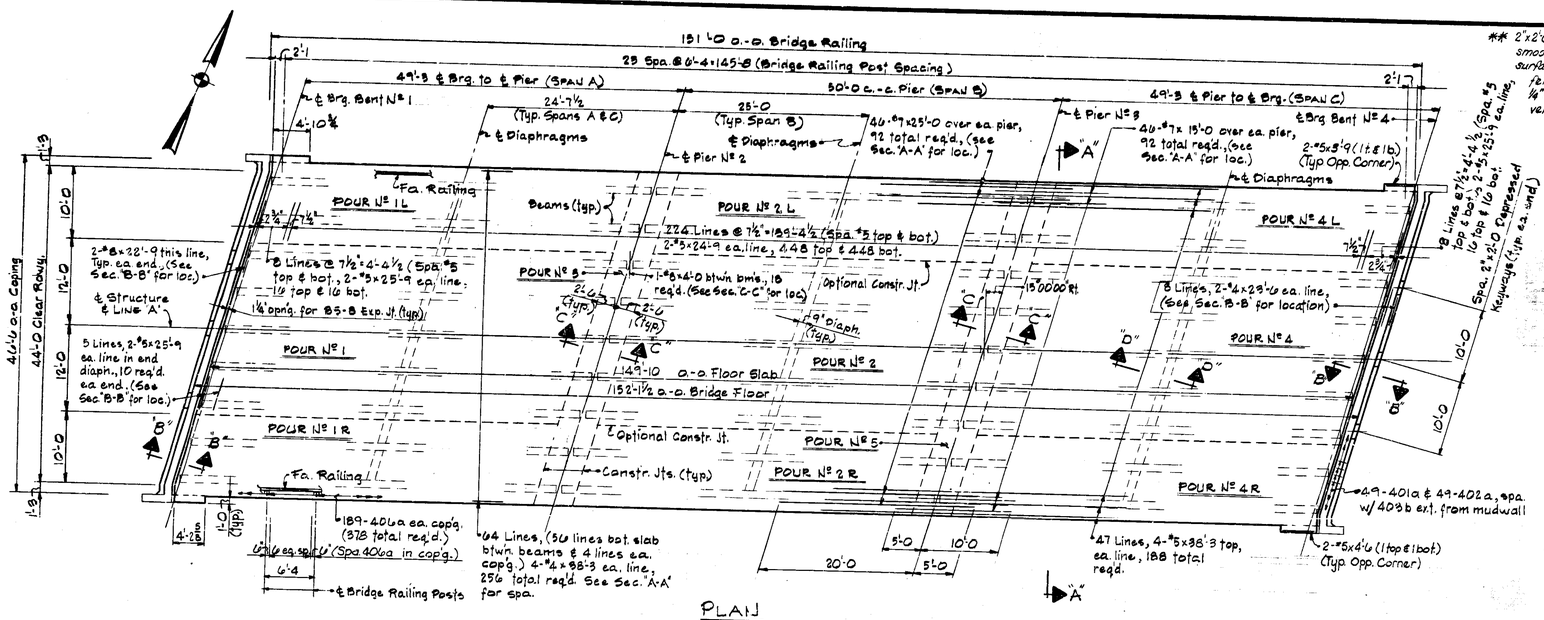
PROJECT:- F-068-6(1)

CONTRACT NO. B-13517

BRIDGE FILE:- 44-70-6634

HERMAN B. WELLS REGISTERED No. 13050 STATE OF INDIANA PROFESSIONAL ENGINEER

TP118



NOTES:

AFTER BEAMS HAVE BEEN ERECTED, CONCRETE FORMS SHALL NOT BE BLOCKED AGAINST THE EXPANSION END OF THE BEAM IN MAKING ANY POURS ADJACENT TO THE BEAM SPANS.

FOR REINFORCING BAR NOTES SEE BRIDGE STANDARD C1.

POUR NUMBERS INDICATE SEQUENCE OF POURS. POURS OVER INTERIOR SUPPORTS TO BE MADE LAST TO REDUCE THE EFFECT OF THE SLAB DEAD LOAD IN THE NEGATIVE MOMENT AREA. POUR NO. 3 & NO. 5 WILL INCLUDE THE DIAPHRAGM AT SUPPORT, AND WILL BE HELD TO A 5' LENGTH. INTERIOR DIAPHRAGMS TO BE POURED BEFORE SLAB IS POURED. THE LONGITUDINAL CONSTRUCTION JOINTS MAY BE ELIMINATED SUBJECT TO THE APPROVAL OF THE ENGINEER.

BRIDGE SEAT ELEVATIONS WERE CALCULATED USING A DENSE P.C.C. SURFACE (2 1/4"). IF THE CONTRACTOR ELECTS TO USE A MODIFIED P.C.C. SURFACE (1 1/2"), BEAM FILLETS ARE TO BE ADJUSTED ACCORDINGLY. (SEE DWG C7)

FLOOR FORMS SHALL NOT BE BLOCKED BETWEEN ADJACENT BEAMS AT OPEN JOINT. IF BLOCKING IS USED, BOTH SIDES SHALL BE POURED SIMULTANEOUSLY.

THE TOP REINFORCING IN THE DECK SHALL BE SECURELY TIED DOWN TO THE DECK FORMS AND/OR THE BEAMS TO PREVENT LIFTING DURING CONCRETE PLACEMENT.

℄ BRIDGE DECK SURFACE: 1 1/2" MODIFIED PORTLAND CEMENT CONCRETE OR 2 1/4" DENSE PORTLAND CEMENT CONCRETE

SUITABLE RESTRAINT SHALL BE PROVIDED TO PREVENT THE ROTATION OF THE OUTSIDE BEAMS FROM CONSTRUCTION LOADS SUCH AS FINISHING MACHINE, FORMS ETC.;

DESIGNED R.S.D. /BC CK'D
DRAWN T.J.N. /BC CK'D W.L.F.
TRACED CK'D

Rev.: 01-26-82 NOTE ADDED

SUPERSTRUCTURE DETAILS
INDIANA STATE HIGHWAY COMMISSION

SCALE:- As Noted DATE:- 3-16-80

Submitted For Approval: Romeen D. Rahn

DRAWING:- C6 OF C7 SHEET:- 12 OF 78

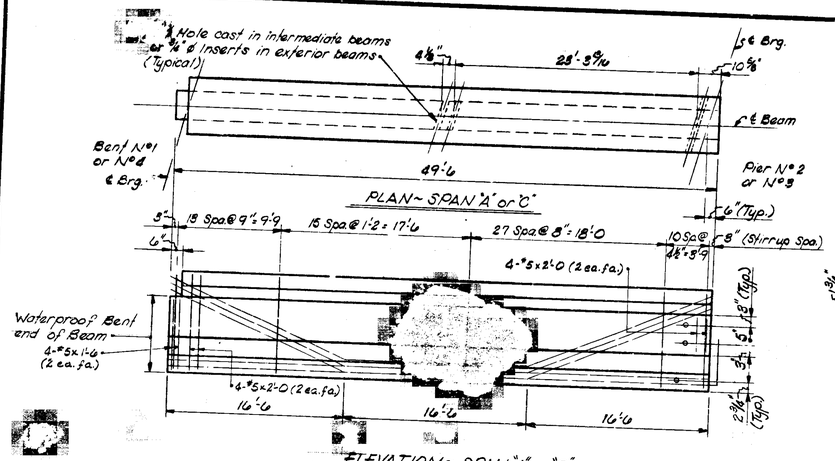
PROJECT:- F-068-6(1)

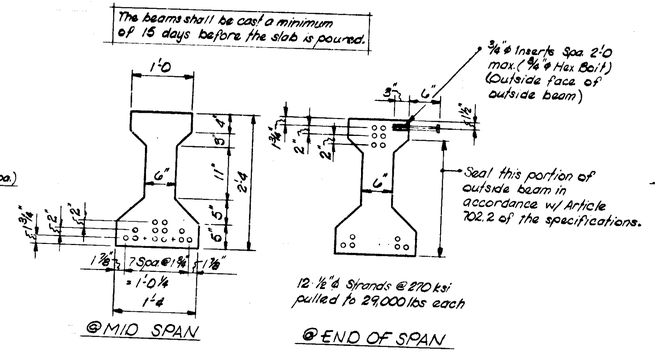
CONTRACT NO. B-13517

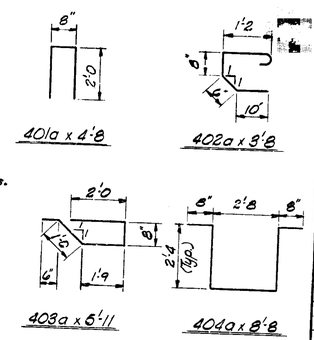
BRIDGE FILE:- 44-70-6684

HERMAN B. PHILLIPS REGISTERED No. 13050 STATE OF INDIANA PROFESSIONAL ENGINEER

TP118

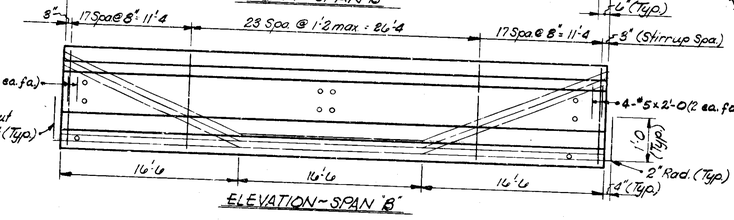


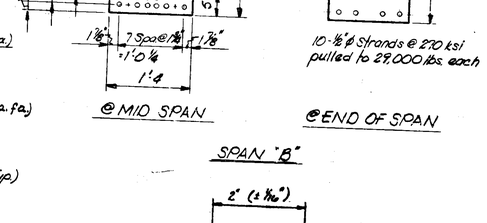


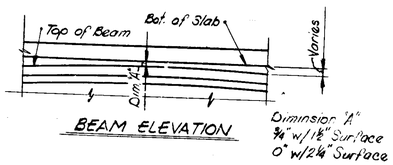


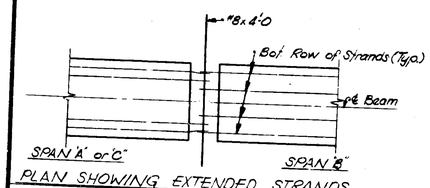
BILL OF MATERIALS

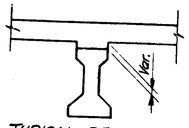
Size & Mark	N° of Bars	Length	Weight (lbs)
REINFORCING STEEL			
#8	4	22'-9	
#8	18	4'-0	
Total #8			435
#7	98	25'-0	
#7	98	15'-0	
Total #7			7,522
#5	188	38'-8	
#5	84	25'-9	
#5	896	24'-9	
#5	4	4'-6	
#5	44	4'-0	
#5	292	8'-0	
#5	168	9'-6	
Total #5			84,927
401a	98	4'-8	
408a	98	3'-8	
403a	80	5'-11	
404a	80	8'-8	
405a	120	4'-10	
406a	378	5'-10	
#4	256	38'-8	
#4	32	23'-6	
Total #4			10,229
Total Reinforcing			53,113
CONCRETE (CLASS C)			CYS.
Pour N°1			24.2
Pour N°1L			12.3
Pour N°1R			12.3
Pour N°2			21.7
Pour N°2L			11.2
Pour N°2R			11.2
Pour N°3			17.3
Pour N°4			24.2
Pour N°4L			12.3
Pour N°4R			12.3
Pour N°5			17.3
Mudwall Portion @ Bent N°1			5.9
Mudwall Portion @ Bent N°4			5.9
Interior Diaphragms			5.2
Total Class "C" Concrete			198.3
MISCELLANEOUS			QUAN.
Bridge Railing Type 3A or C1			302 Lft.
Expansion Joint Type BS-8			101 Lft.
Structural Members			1 L. Sum
Bridge Deck Surface			775 Sys
Blasting & Cleaning			775 Sys
Finishing & Curing			775 Sys
Surface Seal			7333 SFT

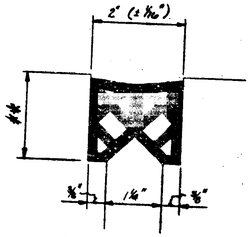












DESIGN DATA

PRESTRESSED BEAMS:
ALL BEAMS SHALL BE TYPE I AS SHOWN ON BRIDGE STANDARD PB1 AND DWG. C8.
SEE BRIDGE STANDARD PB1 AND PB10 FOR ADDITIONAL DESIGN DATA.
SEE BRIDGE STANDARD PB1 FOR ADDITIONAL DETAILS.
SEE BRIDGE STANDARD PB11 FOR BEARING PAD DETAILS.
1/2" ø STRANDS TO BE PULLED TO 29,000 LBS. EACH.

SPAN "A" OR "C"	SPAN "B"
f'c = 5000 PSI	f'c = 5000 PSI
f'ci = 4300 PSI	f'ci = 4000 PSI

APPROXIMATE CAMBER (INCHES):

	SPAN "A" OR "C"	SPAN "B"
CAMBER AS ERECTED	= .999	.735
DEFLECTION UNDER SLAB D.L.	= - .616	-.617
RESIDUAL BEAM CAMBER	= .383	.118

LIVE LOAD:
HS 20-44 WITH IMPACT AND DISTRIBUTION OF LOADS IN ACCORDANCE WITH 1977 AASHTO SPECIFICATIONS AND INTERIM SPECIFICATIONS

DEAD LOAD:
ACTUAL WEIGHT PLUS 54#/SQ. FT. ROADWAY TO PROVIDE FOR THE WEIGHT OF THE BRIDGE DECK SURFACE PLUS THE FUTURE WEARING SURFACE.

NOTES:
THE COST OF PRESTRESSED CONC. I BEAMS TYPE I, ELASTOMERIC BEARING PADS, 3/4" ø x 2'-6 THREADED DOWELS, 3/4" ø THREADED INSERTS, 3/4" ø HEX BOLTS, SEALING EXTERIOR FACE OF EXTERIOR BEAMS, AND EXPANDED POLYSTYRENE TO BE INCLUDED IN LUMP SUM BID FOR STRUCTURAL MEMBERS.
FOR REINF. BAR NOTES, SEE BRIDGE STANDARD C1.

NOTE: BRIDGE SEAT ELEVATIONS WERE CALCULATED USING DESIGN CAMBER & DEADLOAD DEFLECTION OF SLAB (RESIDUAL BEAM CAMBER) WITH TOP OF BEAM AT DIM. "A" FROM BOTTOM OF SLAB ELEVATION AT CENTERLINE OF SPAN. ACTUAL CAMBERS WHICH ARE GREATER THAN DESIGN CAMBERS WILL BE TAKEN CARE OF BY PERMITTING THE TOP OF THE BEAM TO EXTEND INTO THE SLAB (LIMIT OF 1 INCH).

DESIGNED RD C'K'D
DRAWN JLP 1-80 C'K'D RP
TRACED C'K'D

SUPERSTRUCTURE DETAILS & BILL OF MATERIALS

INDIANA STATE HIGHWAY COMMISSION

SCALE:- No Scale DATE:- 5-16-80

SUBMITTED FOR APPROVAL: Ramesh D. Patel

DRAWING:- C7 OF C7 SHEET:- 13 OF 78

PROJECT:- F-068-6(1)

CONTRACT NO. B-13517

BRIDGE FILE:- 44-70-6084

RAMAN D. PATEL REGISTERED No. 13050 STATE OF INDIANA PROFESSIONAL ENGINEER

TP118

STRUCTURE DATA

* IF CONTRACTOR ELECTS TO USE METAL PIPE THICKNESS AS SHOWN BELOW ARE TO BE USED.

STRUCTURE NUMBER	LOCATION	LEFT	RIGHT	CROSS	SIZE INCHES	DESCRIPTION (SEE STD. SHEET "MP" FOR ACCEPTABLE TYPE OF PIPE WITHIN EACH GROUP) GROUP	DESCRIPTION	LENGTH FT.	SKEW	COVER FT.	FLOW LINE UP STREAM ELEV.	FLOW LINE DOWN STREAM ELEV.	CONCRETE CLASS "A" CU. YDS.	"B" BORROW CU. YDS.	METHOD OF BACKFILL CLASS	THICKNESS STEEL *	THICKNESS ALUM. *	VELOCITY	RIPRAP SYS.	PIPE END SECTION EA.	REINF. STEEL LBS.	REMARKS	PLANS ON SHEET NO.
1	616+50'A'	✓																					
2	619+45'A'		✓		12	L	Inlet Type J-10 ₵	40		2	904.66	904.66 903.87			A							18" C.M.P. To Be Removed	4
3	620+20'A'		✓		12	D	Pipe Catch Basin 12"	6		1	904.95	904.95 904.63			A							Connect To STR. Nº 6	4
4	620+20'A'		✓		12	L	Inlet Type M-10 ₵	40		2	904.63	904.63 904.23			A							Connect To STR. Nº 4 Connect To STR. Nº 3	4
5	620+20'A'	✓			12	L	Inlet Type M-10 ₵	72		2	904.23	904.23 903.87			A							Connect To STR. Nº 5 Connect To STR. Nº 4	4
6	619+45'A'				12	L	Inlet Type M-10 ₵	96		4	903.87	903.87 895.00			B			16	1			Connect To STR. Nº 6 Connect To STR. Nº 5 & 2	4
7			✓	6			F.B.C.P.C.S.	70							A							Drains End Bent	8
8			✓	6			F.B.C.P.C.S.	70							A							Drains End Bent	8

LEGEND FOR ABBREVIATION

F.B.C.C.S./P.I.____ FULLY BITUMINOUS COATED CORRUGATED STEEL WITH PAVED INVERT.
F.B.C.C.A.A./P.I.___ FULLY BITUMINOUS COATED CORRUGATED ALUMINUM ALLOY WITH PAVED INVERT.
F.B.C.C.S._____ FULLY BITUMINOUS COATED CORRUGATED STEEL.
C.S._____ CORRUGATED STEEL.
C.A.A._____ CORRUGATED ALUMINUM ALLOY.
S.P.S._____ STRUCTURAL PLATE STEEL.
F.B.C.P.C.S._____ FULLY BITUMINOUS COATED PERFORATED CORRUGATED STEEL.
F.B.C.S.A./P.I.____ FULLY BITUMINOUS COATED CORRUGATED STEEL ARCH WITH PAVED INVERT.
F.B.C.C.A.A.A./P.I._ FULLY BITUMINOUS COATED CORRUGATED ALUMINUM ARCH WITH PAVED INVERT.
F.B.C.C.A._____ FULLY BITUMINOUS COATED CORRUGATED STEEL ARCH.
F.B.C.C.A.A.A.____ FULLY BITUMINOUS COATED CORRUGATED ALUMINUM ALLOY ARCH.
C.S.A._____ CORRUGATED STEEL ARCH.
C.A.A.A._____ CORRUGATED ALUMINUM ALLOY ARCH.
S.P.S.A._____ STRUCTURAL PLATE STEEL ARCH.

APPROACH TABLE

FEDERAL ROAD REGION NO.	STATE	PROJECT NO	FISCAL YEAR	SHEET NO	TOTAL SHEETS
5	IND	F-068-6(1)	1979	15	73

LOCATION	DESCRIPTION	RADIUS FT.	WIDTH FT.	LENGTH FT.	BITUMINOUS BASE-660#/SYS. TON	BITUMINOUS SURFACE-110#/SYS. TON	BITUMINOUS MIXTURE FOR APPROACHES TON	9" COMPACTED AGGREGATE BASE	BITUMINOUS MATERIAL FOR TACK COAT
STA. 616+25.30'A' Rt.	Spl. Public Road App.		20	100	172	27.7			515
STA. 619+67'A' Lt.	Cl. IV Comm. Drive		20	20			26.9		82
Sta 619+74 Rt.	Cl. II Drive	25+15	12	18			4.4	4.5	
TOTALS					172	27.7	31.3	4.5	1,105

UNDERDRAIN TABLE

RUN NO.	LOCATION	6" GROUP "K" PIPE	6" NON-PREF FBCCS PIPE	OUTLET	WYES	BENDS	SODDING SYS.	DELIN. POSTS
1	STA. 615+00 To STA. 617+20'A' Lt.	220	14	Ditch Lt. of Sta. 615+00		1-90°	2	1
2	STA. 615+00 To STA. 617+14'A' Rt.	214	14	Ditch Rt. of Sta. 615+00		1-90°	2	1
3	STA. 618+75 To STA. 619+45'A' Lt.	64	8	Connect To STR. Nº 6		1-45°		
4	STA. 618+68 To STA. 619+45'A' Rt.	70	8	Connect To STR. Nº 2		1-45°		
5	STA. 619+45 To STA. 620+20'A' Lt.	66	8	Connect To STR. Nº 5		1-45°		
6	STA. 619+45 To STA. 620+20'A' Rt.	66	8	Connect To STR. Nº 3		1-45°		
	6 Bends @ 2 Lft./Bend		12					
	TOTAL =	700	72				4	2

AGGREGATE FOR UNDERDRAINS
772 Lft. x 0.09 cys/Lft. = 69.48 cys.

PAVED SIDE DITCH AND SODDING SUMMARY TABLE

STATION TO STATION	PAVED SIDE DITCH (Lineal Feet) TYPE	PAY LENGTH	NUMBER OF LUGS	PAY LENGTH	CUT OFF WALLS	PAY LENGTH	TOTAL PAY LENGTH	SODDING (Square Yards) FOR PAVED SIDE DITCH	FOR DITCHES	OTHER	TOTAL SQUARE YARDS SOD	SHEET NUMBER
615+00 To 617+00									332		332	4
619+45 To 620+30										114	114	4
619+78 To 620+45 Lt.										110	110	4
TOTALS: SODDING = 556 sys.												

RIGHT-OF-WAY MARKERS

STATION	OFFSET	LEFT	RIGHT
615+20'A'	Rt	✓	
616+89'A'	108 ±	✓	
617+85'A'	98 ±	✓	
619+48'A'	54 ±	✓	
619+75'A'	49 ±	✓	
619+75'A'	45 ±	✓	
620+50'A'	45 ±	✓	
51+00'S-1-A'	Rt		✓
50+80'S-1-A'	50		✓
616+75'A'	Rt		✓
619+10'A'	55 ±		✓
619+15'A'	40 ±		✓
620+20'A'	40 ±		✓
620+34'A'	70 ±		✓

RIPRAP

SHT. NO.	LOCATION	TYPE	SYS.
9	STA. 617+35'A' Lt. & Rt.	Revetment	331
9	STA. 617+77'A' Lt. & Rt.	Revetment	42
9	STA. 618+13'A' Lt. & Rt.	Revetment	42
9	STA. 618+54'A' Lt. & Rt.	Revetment	24
9	STRUCTURE Nº 6	Revetment	16
	TOTAL		680

Rev: 8-18-81, Class II Dr. 619+74 Rt.

MISCELLANEOUS TABLES

F-068-6(1)
B-13517
44-70-6634

STATE OF INDIANA No 13050 REGISTERED PROFESSIONAL ENGINEER

TP107

1976

SHEET 14 OF 73

BRIDGE FILE 44-70-6634

STRUCTURE QUANTITIES

ITEM	CONCRETE CLASS C SUPERSTR CU. YDS.	CONCRETE CLASS A SUBSTR CU. YDS.	CONCRETE CLASS B ABOVE FTG CU. YDS.	CONCRETE CLASS B IN FTG. CU. YDS.	CONCRETE RAILING CLASS C CU. YDS.	CONCRETE RAILING CLASS C LIN. FT.	REINF. STEEL TOTAL LBS.	STRUCT. STEEL *** LBS.	ANCHOR RODS MK-AR EACH	ANCHOR PLATES MK-AP EACH	PILES UNTREATED TIMBER NO.	PILES UNTREATED TIMBER LIN. FT.	PILES TREATED TIMBER NO.	PILES TREATED TIMBER LIN. FT.	PILES 12" STEEL ENCASED CONC. NO.	PILES 12" STEEL ENCASED CONC. LIN. FT.	PILES STEEL H BEARING NO.	PILES STEEL H BEARING LIN. FT.	CAST IRON DRAIN PIPE LBS.	CAST IRON, GRATES, BASINS, & FITTINGS LBS.	RAILING TYPE SA OR C1 LIN. FT.	EXP. JOINT TYPE 858 LIN. FT.	EXP. JOINT CLASS LIN. FT.	CONC. STR. MEMBERS BOX BEAMS TYPE SQ. FT.	CONC. STR. MEMBERS CONC. I BEAM TYPE I LUMP SUM	APPLIED SHEET MOISTURE SQ. FT.	BITUM MIXTURE FOR APPROACHES TONS	MOD. P.C. CONCRETE SURFACE SQ. YDS.	DECK DRAIN EACH	SURFACE SEAL SQ. FT.	BLASTING & CLEANING SQ. YDS.	FINISHING & CURING SQ. YDS.
BENT N°1		16.4																														
PIER N°2		59.5		42.7			2,488								8	25C																
PIER N°3		59.5		42.7			5,635								20	400																
BENT N°4		16.5					5,635								20	400																
							2,488								8	25C																
SUPERSTRUCTURE	193.3						53,113														302	101			1			775		733	775	775
Reinf. Steel for Approach Structures																																
Reinf. Steel for R.C. Bridge Approaches																																
Reinf. Steel for Lip Gutter, Pvmt., Tapers, etc.							2,611																									
TOTALS	193.3	151.7		85.4			71,970								56	1,312					302	101			1			775		* 733	775	775

* ESTIMATED QUANTITY
SEE SPECIAL PROVISIONS

BRIDGE FILE

APPROACH STRUCTURES

STRUCT. NO.	LOCATION	DESCRIPTION SIZE	DESCRIPTION KIND	LENGTH LIN. FT.	CONCR. CL. A IN STRS. CU. YDS.	REINF STEEL LBS.	PIPE END SEC. EACH		REMARKS

ESTIMATE OF QUANTITIES

STRUCTURE PAY ITEMS

CODE NO.	DESCRIPTION	UNIT	STRUCTURE		TOTAL QUANTITY
	MOBILIZATION AND DEMOBILITATION	L.SUM			1
51002	CONCRETE CLASS C IN SUPERSTRUCTURE	CYS.			193.3
51001	CONCRETE, CLASS A IN SUPERSTRUCTURE	CYS.			
51005	CONCRETE, CLASS A IN SUBSTRUCTURE	CYS.			191.7
51010	CONCRETE, CLASS B ABOVE FOOTINGS	CYS.			654
51015	CONCRETE, CLASS B IN FOOTINGS	CYS.			
51875	SPECIAL CLASS A CONCRETE	SFT			
51045	CONCRETE STRUCTURAL MEMBERS	LSUM			1
51030	REINFORCING STEEL	LBS.			71,970
51032	EPOXY COATED REINFORCING STEEL	LBS			
51035	STRUCTURAL STEEL	LBS.			
51038	STRUCTURAL STEEL	LSUM			
51080	BRONZE PLATES	LBS.			
51070	ANCHOR PLATES (MK-AP 1)	EACH			
51075	ANCHOR PLATES (MK-AP 2)	EACH			
51080	ANCHOR PLATES (MK-AP 3)	EACH			
51085	ANCHOR PLATES (MK-AP 4)	EACH			
51112	ANCHOR BOLTS	EACH			
51068	TIE DOWN ASSEMBLY MK-UA	EACH			
51095	CAST IRON, DRAIN PIPE, 4 INCH	LBS.			
51100	CAST IRON, DRAIN PIPE, 6 INCH	LBS.			
51105	CAST IRON, DRAIN PIPE, 8 INCH	LBS.			
51110	CAST IRON, GRATES, BASINS AND FITTINGS	LBS.			
51134	REMOVAL OF PRESENT RAILING	LFT.			
51132	RAILING RESET	LFT.			
51115	RAILING (TYPE 5 OR C)	LFT.			
51120	RAILING (TYPE 5A OR C1)	LFT.			302
51125	RAILING (TYPE 6 OR D)	LFT.			
51130	RAILING (TYPE 7 OR E)	LFT.			
51030	CLASS C, CONCRETE RAILING	CYS.			
51025	CLASS C, CONCRETE RAILING	LFT.			
51131	BARRIER RAILING TYPE X	LFT			
51215	CLASS X EXCAVATION	CYS.			
51220	WET EXCAVATION	CYS.			293
51223	WATERWAY EXCAVATION	CYS.			
51224	WATERWAY EXCAVATION	LSUM			
51225	DRY EXCAVATION	CYS.			64
51230	FOUNDATION EXCAVATION (UNCLASSIFIED)	CYS.			50
51231	FOUNDATION EXCAVATION (UNCLASSIFIED)	LSUM			
51813	PNEUMATICALLY PLACED MORTAR	SFT.			
51870	REPOINTING MASONRY IN SPR'S.	SFT.			
51814	WELDED STEEL WIRE FABRIC	SFT.			
51859	PAINTING OLD STEEL BRIDGE	LSUM			
51881	EXPANSION JOINT, TYPE BS2	LFT.			
51885	EXPANSION JOINT, TYPE BS5	LFT.			
51887	EXPANSION JOINT, TYPE BS8	LFT.			101
51888	EXPANSION JOINT, TYPE BS9	LFT.			
51890	EXPANSION JOINT, TYPE BS11	LFT.			
51925	EXPANSION JOINT, CLASS S-S	LFT.			
51926	EXPANSION JOINT, CLASS T-S	LFT.			

STRUCTURE PAY ITEMS

CODE NO.	DESCRIPTION	UNIT	STRUCTURE		TOTAL QUANTITY
51135	TIMBER PILES FURNISHED, UNTREATED	LFT.			
51140	TIMBER PILES DRIVEN, UNTREATED	LFT.			
51145	TIMBER PILES FURNISHED, TREATED	LFT.			
51150	TIMBER PILES DRIVEN, TREATED	LFT.			
51155	PILE SHELLS FURNISHED AND DRIVEN (12 INCH)	LFT.			1,312
51160	PILE SHELLS FURNISHED AND DRIVEN (14 INCH)	LFT.			
51185	STEEL H PILES FURNISHED AND DRIVEN (8 BP 36)	LFT.			
51190	STEEL H PILES FURNISHED AND DRIVEN (10 BP 42)	LFT.			
51195	STEEL H PILES FURNISHED AND DRIVEN (12 BP 53)	LFT.			
51810	PILE ENCASEMENT (CONCRETE)	LFT.			
	SURFACE SEAL	LSUM			1
51826	SURFACE SEAL	SFT.			
51827	BRIDGE DECK MEMBRANE	LSUM			
51842	BRIDGE DECK OVERLAY	SYS.			
51845	BRIDGE DECK SURFACE	SYS.			775
		CYS.			
51863	BRIDGE DECK PATCHING	SFT.			
51833	CONCRETE SCARIFYING	SYS.			
51840	ADDITIONAL CONCRETE SCARIFYING	SYS.			
51837	BLASTING AND CLEANING	SYS.			775
51838	FINISHING AND CURING	SYS.			775
51328	REMOVAL OF PRESENT STRUCTURE (PORTIONS)	LSUM			
51330	REMOVAL OF PRESENT STRUCTURE	LSUM			1
51335	TEMPORARY BRIDGE AND APPROACHES	LSUM			1
51366	CONCRETE SLOPEWALL 5 INCH	SYS.			
51385	SLOPEWALL	SYS.			
51370	RIPRAP	SYS.			70
51875	REVETMENT RIPRAP	TON.			595
51371	HANDLAID RIPRAP 12 INCH	SYS.			
51372	DUMPED RIPRAP	TON			4.5 24
51374	PLASTIC FILTER CLOTH	SYS.			680
51106	DECK DRAINS	EACH			
51395	STEEL DRAIN PIPE (6 INCH)	LSUM			
51400	STEEL DRAIN PIPE (8 INCH)	LSUM			
51092	STEEL PIPE CONDUIT (2 INCH)	LFT.			
51866	RIVETS REMOVED	EACH			
51864	FIELD DRILLED HOLES	EACH			
51967	STRUCTURAL STEEL CUTTING	SFM			
51863	FIELD DRILLED HOLES IN CONCRETE	E/CH			

APPROACH PAY ITEMS

CODE NO.	DESCRIPTION	UNIT	STRUCTURE		TOTAL QUANTITY
	EXCAVATION FOR SUBGRADE TREATMENT	CYS			605
02020	UNCLASSIFIED EXCAVATION	CYS.			
52240	COMMON EXCAVATION	CYS.			1900
52245	BORROW	CYS.			
52250	B BORROW	CYS.			
52255	B BORROW FOR STRUCTURE BACKFILL	CYS.			53
52303	REMOVAL OF PAVEMENT	SYS.			982
02235	BREAKING PAVEMENT	SYS.			
52490	TERMINAL JOINT	LFT.			
52495	CONTRACTION JOINT, TYPE D-1 CONCRETE CURB	LFT.			
52280	CONCRETE PAVEMENT REINFORCED (7 INCH)	LFT.			595
52285	CONCRETE PAVEMENT REINFORCED (8 INCH)	SYS.			
52290	CONCRETE PAVEMENT REINFORCED (9 INCH)	SYS.			
52300	CONCRETE PAVEMENT REINFORCED (10 INCH)	SYS.			
06070	CONCRETE SIDEWALK	SYS.			127
52305	TYPE P COMPACTED AGGREGATE FOR BASE (SIZE NO. 53)	TON			
52500	COVER AGGREGATE	TON			
52505	COVER AGGREGATE (SIZE NO. 12)	TON			
52605	AGGREGATE FOR SHOULDER DRAINS	TON			
52610	AGGREGATE FOR UNDER DRAINS	CYS.			70
52305	TYPE O COMPACTED AGGREGATE FOR BASE (SIZE NO. 53)	TON			
52310	SUBBASE	CYS.			4.5 24
52315	BITUMINOUS STABILIZED SUBBASE TYPE I, II, OR III	TON			
52320	BITUMINOUS STABILIZED SUBBASE	TON			
52445	BITUMINOUS BASE	TON			
5 04260	BITUMINOUS BASE (SIZE NO 50)	TON			826 655
4	OPEN GRADED BITUM. BASE NO 5	TON			43.7
52490	BITUMINOUS SURFACE	TON			128
	BITUMINOUS MATERIAL FOR TACK COAT	SYS.			
52961	BITUMINOUS MATERIAL FOR PRIME COAT	SYS.			4,969
04348	SEAL COAT TYPE 2	SYS.			770
52470	BITUMINOUS MIXTURE FOR APPROACHES	TON			31.3
52475	BITUMINOUS MIXTURE FOR SHOULDER	TON			
52480	BITUMINOUS MATERIAL, APPLIED	TON			
52500	GUARD RAIL, TYPE A	LFT.			30
52505	GUARD RAIL, TYPE B	LFT.			
52510	GUARD RAIL, TYPE C	LFT.			
52515	GUARD RAIL, TYPE D	LFT.			
52520	GUARD RAIL, TYPE E	LFT.			
52525	GUARD RAIL, TYPE F	LFT.			
52530	GUARD RAIL, TYPE G	LFT.			350
52531	GUARD RAIL, TYPE H	LFT.			
	GUARD RAIL END TREATMENT	EACH			3
52380	SODDING	SYS.			560
	MULCHED SEEDING (LEGUME)	SYS.			2,037
	MULCHED SEEDING "TR"	SYS.			
1. 52400	MULCHING MATERIAL	TON			992
2. 52405	FERTILIZER	TON			
52410	WATER	M.G.			
3. 52415	AGRICULTURAL LIMESTONE	TON			6
52398	SEED MIXTURE "CV"	LBS.			2
52401	MULCHING MATERIAL (WOOD CELLULOSE FIBER)	TON			
52640	MAINTAINING TRAFFIC	LSUM			
52370	CLEARING RIGHT-OF-WAY	LSUM			
52438	BREAKAWAY CABLE TERMINAL TYPE "A"	EACH			

APPROACH PAY ITEMS

CODE NO.	DESCRIPTION	UNIT	STRUCTURE		TOTAL QUANTITY
07025	PIPE: GR. A (0.064" FBCCS) 12"	LFT.			
07075	PIPE: GR. A (0.064" FBCCS) 15"	LFT.			
07125	PIPE: GR. A (0.064" FBCCS) 18"	LFT.			
07175	PIPE: GR. A (0.064" FBCCS) 24"	LFT.			
07225	PIPE: GR. A (0.064" FBCCS) 30"	LFT.			
07275	PIPE: GR. A (0.064" FBCCS) 36"	LFT.			
07325	PIPE: GR. A (0.064" FBCCS) 42"	LFT.			
10000	PIPE: GR. D (0.064" CS) 12"	LFT.			
10025	PIPE: GR. D (0.064" CS) 15"	LFT.			
10050	PIPE: GR. D (0.064" CS) 18"	LFT.			1
10075	PIPE: GR. D (0.064" CS) 24"	LFT.			
10100	PIPE: GR. D (0.064" CS) 30"	LFT.			
10125	PIPE: GR. D (0.064" CS) 36"	LFT.			
10150	PIPE: GR. D (0.064" CS) 42"	LFT.			
34000	PIPE: 0.052" FBC PERF. CS 6"	LFT.			140
29000	PIPE: 0.064" FBCCS 12"	LFT.			
52375	CONCRETE CLASS A IN STRUCTURE	CYS.			
52376	CONCRETE CLASS C IN STRUCTURE	CYS.			
46000	PIPE END SECTION 12"	EACH			1
46005	PIPE END SECTION 15"	EACH			
46010	PIPE END SECTION 18"	EACH			
46015	PIPE END SECTION 21"	EACH			
46020	PIPE END SECTION 24"	EACH			
46025	PIPE END SECTION 27"	EACH			
46030	PIPE END SECTION 30"	EACH			
46035	PIPE END SECTION 33"	EACH			
46040	PIPE END SECTION 36"	EACH			
45000	INLET, TYPE A-1	EACH			
45025	INLET, TYPE D-6	EACH			
45030	INLET, TYPE E-7	EACH			
45070	INLET, TYPE P-12A	EACH			
06335	PAVED SIDE DITCH TYPE A	LFT.			
06340	PAVED SIDE DITCH TYPE B	LFT.			
06345	PAVED SIDE DITCH TYPE C	LFT.			
06350	PAVED SIDE DITCH TYPE D	LFT.			
06355	PAVED SIDE DITCH TYPE E	LFT.			
06360	PAVED SIDE DITCH TYPE F	LFT.			
06365	PAVED SIDE DITCH TYPE G	LFT.			
52831	DRILLED HOLES FOR MUDJACKING	EACH			
52830	MATERIAL FOR MUDJACKING	CYS.			
	PIPE: GR.K 6"	LFT.			700
	PIPE: NON-PERF F.B.C.C.S. 6"	LFT.			72
	INLET, TYPE J-10	EACH			
	INLET, TYPE M-10	EACH			3
	PIPE: GR.L 12"	LFT.			248
	PIPE: GR.P 12"	LFT.			6
	E.E.O. TRAINEE (1)	HRS.			1,000

APPROACH PAY ITEMS

CODE NO.	DESCRIPTION	UNIT	STRUCTURE		TOTAL QUANTITY
08040	42" FENCE, F. FIELD	LFT.			
08045	48" FENCE, CHAIN LINK	LFT.			
52340	CONSTRUCTION SIGNS (TYPE A)	EACH			26
52345	CONSTRUCTION SIGNS (TYPE B)	EACH			
52350	STANDARD BARRICADES (TYPE III)	EACH			2
	STANDARD BARRICADES (TYPE I)	EACH			8
06650	STOP SIGN, TYPE R-1A	EACH			1
06652	DO NOT PASS SIGN, TYPE R-11-A	EACH			
06655	YIELD SIGN, TYPE R-2A	EACH			
06657	PASS LTN CARE SIGN, TYPE R-12A	EACH			
06660	CURVE SIGN, TYPE W-2AF	EACH			
06665	CURVE SIGN, TYPE W-2AL	EACH			
06670	REVERSE CURVE SIGN, TYPE W-4AR	EACH			
06675	REVERSE CURVE SIGN, TYPE W-4AL	EACH			
06680	LARGE ARROW SIGN, TYPE W-11A	EACH			
06685	STOP AHEAD SIGN, TYPE W-13A	EACH			
06725	DELINEATOR WIT. POST, TYPE D-1 3 IN W	EACH			22
0674	DELINEATOR WITH POST, TYPE D-2 3 INCH	EACH			
	DO NOT SPRAY SIGN	EACH			6
06770	DELINEATOR POST	EACH			
06771	FLEXIBLE DELINEATOR POST	EACH			2
52306	TEMPORARY PAVEMENT MARKING TAPE	LFT.			6200
52367	TEMPORARY PAVEMENT MARKING PAINT	LFT.			800
52390	RIGHT-OF-WAY MARKERS	EACH			14
06500	MONUMENT, TYPE A	EACH			
06505	MONUMENT, TYPE B	EACH			
06510	MONUMENT, TYPE C	EACH			
06515	MONUMENT, TYPE D	EACH			
52821	FLASHING ARROW SIGN	EACH			
06713	LINE, SOLID, WHITE, 4"	LFT.			115
06715	LINE, SOLID, YELLOW, 4"	LFT.			70
	THERMOPLASTIC LINE, SKIP	LFT.			
06702	WHITE, 5"	LFT.			
06716	REMOVAL OF LINE, SOLID, WHITE, 8"	LFT.			
06717	REMOVAL OF LINE, SOLID, YELLOW, 4"	LFT.			
06718	REMOVAL OF LINE, SKIP, WHITE, 8"	LFT.			
52536	TEMPORARY CONCRETE BARRIER	LFT.			
52819	TEMPORARY CROSSOVER TYPE "B"	EACH			
	LINE, SKIP, YELLOW, 4"	LFT.			218
	SPECIAL MARKING, STOP LINE 24"	EACH			1

1. INCLUDES ——— TONS FOR SEED MIXTURE "R"
2. INCLUDES ——— TONS FOR SEED MIXTURE "R"
3. INCLUDES ——— TONS FOR SEED MIXTURE "R"
4. INCLUDES 46 TONS FOR TEMPORARY RUNAROUND.
5. INCLUDES 409 TONS FOR TEMPORARY RUNAROUND.

* ESTIMATED QUANTITY 733 SFT. SEE SPECIAL PROVISIONS

REVISIONS	
DATE	ITEM
8-18-81	52495, 52308, 52470, 52530, "Mulched Seeding TR" deleted
01-26-82	52370 AND 51826 DELETED SURFACE SEAL ADDED
02-22-82	51230 ADDED Revetment Riprap, Open Graded Bitum. Base No 5, Inlet, Type J-10, Inlet, Type M-10, E.E.O. Trainee(1) Added. SPECIAL MARKING, STOP LINE 24", 06650 ADDED 52445, 04260, 52310, 52378, SURFACE SEAL

SUMMARIZED JLF C'K'D DEA & TJN

TRACED DEA C'K'D JLF

NOVEMBER, 1978

TP 104

BRIDGE ESTIMATE OF QUANTITIES

INDIANA STATE HIGHWAY COMMISSION

DATE 5-16-80

SUBMITTED FOR APPROVAL: Damien O. Pelsor

PROJECT: F-068-6(1)
CONTRACT NO: B-13517
BRIDGE FILE: 44-70-6634

SHEET 16 OF 73

HOWARD D. PALEY REGISTERED No. 13050 STATE OF INDIANA PROFESSIONAL ENGINEER

END STR.